PROPOSED BASIN MAP
Approved: DWS ARCH E1 30"x42"
Checked: KMW
Designer: MJR
Project Management Initials:

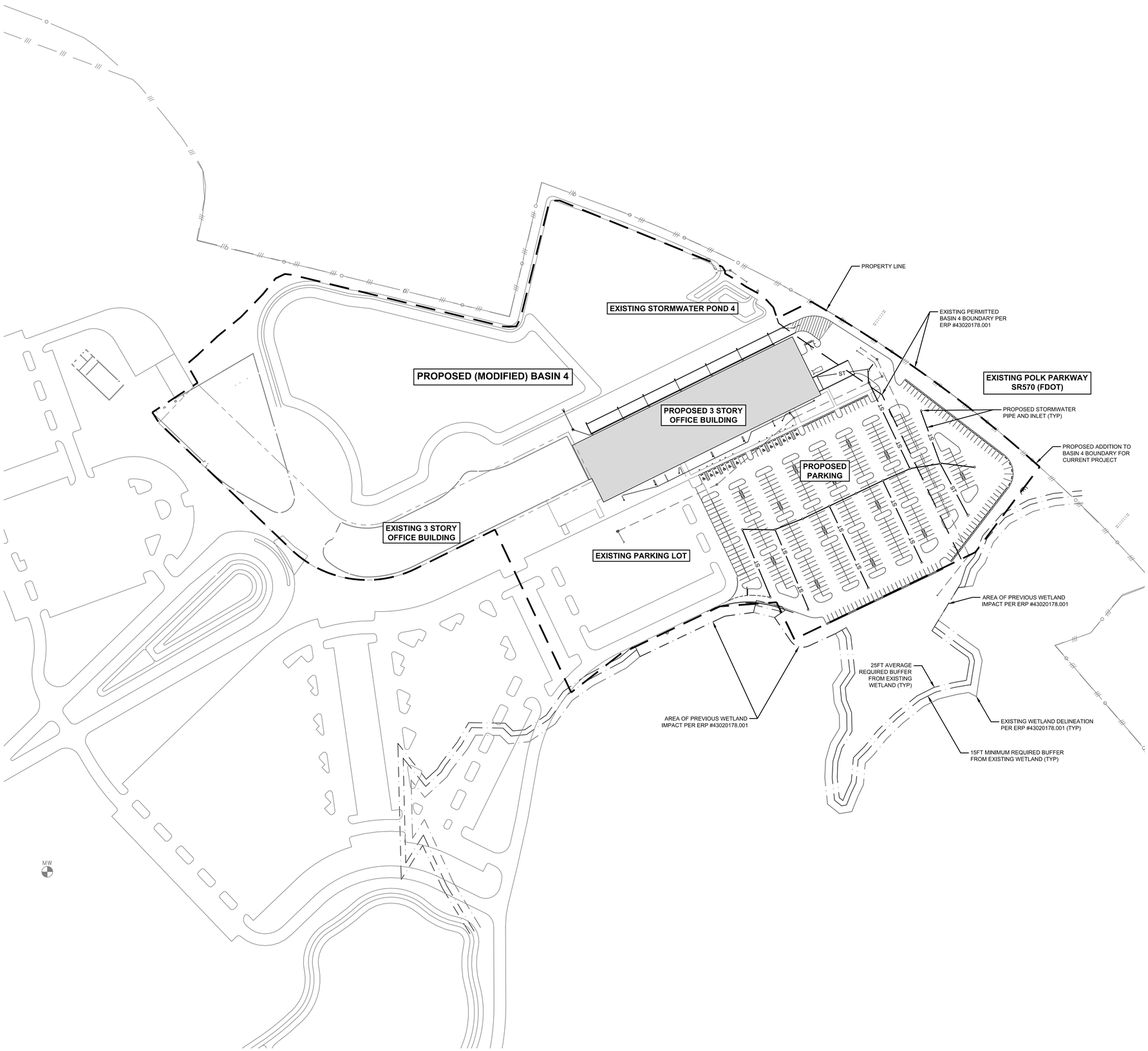

KEY MAP

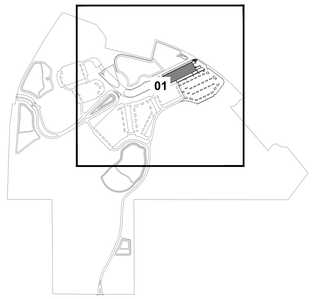

NOTES:

- **EXISTING WETLAND AND BASIN BOUNDARY INFORMATION TAKEN FROM PLANS AND DOCUMENTS FROM ERP #43020178.001, A PREVIOUSLY-PERMITTED PROJECT AT THIS SITE. EXISTING FEATURES AND GEOMETRY (INCLUDING BUILDINGS, PARKING, AND PONDS) IS TAKEN FROM THE CHASTAIN AND SKILLMAN "PUBLIX SUPER MARKETS, INC. CORPORATE HEADQUARTERS" PLANS ASSOCIATED WITH THE ABOVE ERP.**
- **REFER TO ERP APPLICATION AND STORMWATER MANAGEMENT REPORT (DATED 07/2019), INCLUDING FIGURE 6 ("WETLAND BUFFER MAP"), FOR ADDITIONAL INFORMATION DEMONSTRATING THAT REQUIRED EXISTING WETLAND OFFSET BUFFERS WILL BE MAINTAINED AS A RESULT OF THE PROPOSED PROJECT.**

Digitally signed by Dennis W Syrja
Date: 2019.08.23 10:55:00 -04'00'

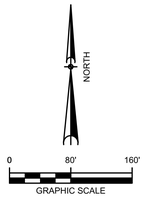

Building Inspection Division
THESE PLANS HAVE BEEN REVIEWED FOR COMPLIANCE WITH THE CURRENT EDITION OF THE FLORIDA BUILDING CODE
Lakeland
Date: 11/15/19
Permit Number: BLD19-06035

AECOM
BATSON-COOK CONSTRUCTION

PROJECT

PUBLIX HEADQUARTERS BUILDING ADDITION AND PARKING LOT EXPANSION

3300 PUBLIX CORPORATE PARKWAY
LAKELAND, FL 33811

CLIENT

Publix

3300 PUBLIX CORPORATE PARKWAY
LAKELAND, FL 33811

www.publix.com

CONSULTANT

AECOM

AECOM TECHNICAL SERVICES, INC.
800 Douglas Entrance
North Tower, 2nd Floor
Coral Gables, FL 33134
305.444.4691 tel 305.447.3580 fax
www.aecom.com

ARCHITECTURE
LICENSE NO. AA26000687

ENGINEERING
CA LIC. NO. 8115

www.aecom.com

REGISTRATION

DENNIS W. SYRJA
LICENSE
No. 43423
STATE OF FLORIDA
PROFESSIONAL ENGINEER

DENNIS W. SYRJA, P.E.
ENGINEER OF RECORD

NOTICE: THE OFFICIAL RECORD OF THIS SHEET IS THE ELECTRONIC FILE SIGNED AND SEALED UNDER RULE 61G15-23.004, F.A.C.

THIS ITEM HAS BEEN DIGITALLY SIGNED AND SEALED BY DENNIS W. SYRJA, P.E. ON THE DATE ADJACENT TO THE SEAL.

PRINTED COPIES OF THIS DOCUMENT ARE NOT CONSIDERED SIGNED AND SEALED AND THE SIGNATURE MUST BE VERIFIED ON ANY ELECTRONIC COPIES.

ISSUE/REVISION

I/R	DATE	DESCRIPTION
0	AUG 23, 2019	CONSTRUCTION DOCUMENTS

PROJECT NUMBER

60601397

SHEET TITLE

PROPOSED BASIN MAP

SHEET NUMBER

CG-100

Last Plotted: 8/22/2019 8:24:42 PM
Filename: S:\PROJECTS_CIVIL\PROJECTS\PUBLIX\900-DW\05900-CAD_BIM (CIVIL)\20-SHEETS\CCG-100 PROPOSED BASIN MAP.DWG

Printed on ___% Post-Consumer Recycled Content Paper

©2016 AECOM Corporation