GRADING & DRAINAGE PLANS
Approved: DWS ARCH E1 30"x42"
Checked: KMW
Designer: MJR
Project Management Initials:

Building Inspection Division
Lakeland
THESE PLANS HAVE BEEN REVIEWED FOR COMPLIANCE WITH THE CURRENT EDITION OF THE FLORIDA BUILDING CODE OR THE CITY OF LAKELAND LAND DEVELOPMENT CODE
Date: 07/16/20
Permit Number: BLD19-06035

STORM STRUCTURE TABLE

	STRUCTURE	STATUS	DETAILS	GRATE/RIM ELEV.	PIPES IN	PIPES OUT	COORDINATES
EXISTING							
	S-104	EXISTING TO BE MODIFIED	EXISTING JUNCTION BOX (LOWER RIM)	EXISTING: 141.10 (RIM) PROPOSED: 140.60 (RIM)	EXISTING 30" RCP INV. (SW)=INACCESSIBLE	EXISTING: 30" RCP INV. (NE)=133.45	N: 1334429.4268' E: 652643.9043'
	S-105	EXISTING TO BE MODIFIED	EXISTING JUNCTION BOX (RAISE RIM)	E3XISTING: 139.91 (RIM) PROPOSED: 142.02 (RIM)	EXISTING 30" RCP INV. (SW)=132.91 PROPOSED: 15" RCP INV. (NW)=133.24	EXISTING: 30" RCP INV. (NE)=INACCESSIBLE	N: 1334564.6664' E: 652800.2163'
	S-106	EXISTING TO BE MODIFIED	EXISTING JUNCTION BOX (RAISE RIM)	EXISTING: 139.67 (RIM) PROPOSED: 139.95 (RIM)	EXISTING 30" RCP INV. (SW) EXISTING: BTM=132.84	EXISTING: 30" RCP INV. (NW) EXISTING: BTM=132.84	N: 1334648.3762' E: 652978.7732'
	S-105A	EXISTING TO BE MODIFIED	EXISTING GRATE INLET (REMOVE GRATE AND SLOT AND RAISE RIM)	EXISTING: 139.00 (GRATE) EXISTING: 137.62 (56"W SLOT) PROPOSED: 139.65 (RIM)	EXISTING: 30" RCP INV. (SE)=132.56 PROPOSED: 36" RCP INV. (SW)=132.52	EXISTING: 54" RCP INV. (NW)=132.50	N: 1334677.1059' E: 652962.5833'
	S-109	EXISTING TO BE MODIFIED	EXISTING JUNCTION BOX (RAISE RIM)	EXISTING: 139.04 (RIM) PROPOSED: 139.92 (RIM)	24' RCP INV. (NW)=132.45	24" RCP INV. (SE)=132.47	N: 1334683.3631' E: 652968.3558'
PROPOSED							
	S-1001	PROPOSED	FDOT TYPE F INLET	140.32 (GRATE)	-	18' RCP INV. (NW)=136.13	N: 1334200.9310' E: 652751.9434'
	S-1002	PROPOSED	FDOT TYPE F INLET	139.15 (GRATE)	18" RCP INV. (SE)=135.42	18" RCP INV. (NE)=135.40	N: 1334338.1266' E:652695.2643'
	S-1003	PROPOSED	FDOT TYPE F INLET	140.32 (GRATE)	-	18" RCP INV. (NW)=135.78	N: 1334175.8427' E: 652828.8399'
	S-1004	PROPOSED	FDOT TYPE F INLET	139.15 (GRATE)	18" RCP INV. (SW)=135.12 18" RCP INV. (SE)=135.12	18" RCP INV. (NE)=135.10	N: 1334338.2410' E: 652761.6686'
	S-1005	PROPOSED	FDOT TYPE F INLET	139.15 (GRATE)	18" RCP INV. (SW)=134.84	18" RCP INV. (NE)=134.82	N: 1334360.1083' E: 652817.7115'
	S-1006	PROPOSED	FDOT TYPE F INLET	140.53 (GRATE)	-	18" RCP INV. (NW)=135.28	N: 1334220.0928' E: 652950.8622'
	S-1007	PROPOSED	FDOT TYPE F INLET	140.53 (GRATE)	18' RCP INV. (SW)=134.56 18' RCP INV. (SE)=134.56	24' RCP INV. (NE)=134.54	N: 1334385.9099' E: 652871.8805'
	S-1008	PROPOSED	FDOT TYPE F INLET	139.15 (GRATE)	24" RCP INV. (SW)=134.28	24' RCP INV. (NE)=134.26	N:1334411.7116' E: 652926.0494'
	S-1009	PROPOSED	FDOT TYPE F INLET	140.53 (GRATE)	-	18" RCP INV. (NW)=134.78	N: 1334271.6961' E: 653059.2001'
	S-1010	PROPOSED	FDOT TYPE F INLET	139.15 (GRATE)	24" RCP INV. (SW)=134.28 18" RCP INV. (SE)=134.00	30" RCP INV. (NE)=133.98	N: 1334437.5133' E:652980.2183
	S-1011	PROPOSED	FDOT TYPE F INLET	140.00 (GRATE)	-	18' RCP INV. (SE)=136.25	N: 1334579.3972' E: 653058.3822'
	S-1012	PROPOSED	FDOT TYPE F INLET	139.15 (GRATE)	-	18' RCP INV. (SW)=135.85	1334464.9998' E: 653166.5022
	S-1013	PROPOSED	FDOT TYPE F INLET	140.00 (GRATE)	-	18" RCP INV. (NW)=136.25	N: 1334367.3570' E: 653153.0930'
	S-1014	PROPOSED	FDOT TYPE F INLET	139.15 (GRATE)	18" RCP INV. (SE)=135.64 18" RCP INV. (NW)=135.64 18" RCP INV. (NE)=135.64	24" RCP INV. (NW)=135.62	N: 1334472.1798' E: 653096.6235'
	S-1015	PROPOSED	FDOT TYPE F INLET	139.15 (GRATE)	30" RCP INV. (SW)=133.72 24" RCP INV. (NE)=135.44	36' RCP INV. (NW)=133.70	N: 1334461.4997' E: 653035.2519'
	S-1016	PROPOSED	FDOT MANHOLE	140.10 (RIM)	EXISTING 30" RCP INV. (SW)=132.84 PROPOSED: 36" RCP INV. (SE)=132.88	EXISTING:30" RCP INV. (NE)=132.84 PROPOSED: 36' RCP INV. (NW)=132.86	N: 1334635.9080' E: 652952.1780'
	S-1017	PROPOSED	FDOT TYPE F INLET	139.15 (GRATE)	12" PVC INV. (SW)133.27 36' RCP INV. (SE)=132.66	36" RCP INV. (N)=132.64	N: 1334661.5243' E: 652951.4149'
	S-1018	PROPOSED	FDOT 12" TRENCH DRAIN	138.56 (GRATE)	-	12" PVC INV. (E)=134.31	N: 1334636.3098' E: 652853.5890'
	S-1019	PROPOSED	FDOT MANHOLE	142.05 (RIM)	15" PVC INV. (E)=132.98	15" RCP INV. (NW)=132.88	N: 1334540.8789' E: 652352.2165'
	S-1020	PROPOSED	24" FDOT MES W/ RIP-RAP SUMP	132.48 (SUMP/MES INVERT)	24" RCP INV. (SE)=132.48	-	N: 1334578.9961' E: 652333.4195'
	S-1021	PROPOSED	FDOT MANHOLE	142.38 (RIM)	15" PVC INV. (SW)=137.36 15" PVC INV. (NE)=135.64	15" RCP INV. (E)=133.36	N: 1334574.5463' E: 652791.6684'
	YD-101	PROPOSED	YARD DRAIN	141.65 (GRATE)	ORD INV. (NW)=137.25	-	N: 1334397.8126' E: 652455.8922'
	YD-102	PROPOSED	YARD DRAIN	141.65 (GRATE)	ORD INV. (NW)=137.25	-	N: 1334429.2148' E: 652519.5703'
	YD-103	PROPOSED	YARD DRAIN	141.76 (GRATE)	ORD INV. (NW)=138.68	-	N: 1334452.6231' E: 652567.4687'
	YD-104	PROPOSED	YARD DRAIN	141.98 (GRATE)	ORD INV. (NW)=137.25	-	N: 1334486.4904' E: 652635.7157'
	YD-105	PROPOSED	YARD DRAIN	141.99 (GRATE)	ORD INV. (NW)=137.25	-	N: 1334517.4503' E: 652698.4970'
	YD-106	PROPOSED	YARD DRAIN	142.00 (GRATE)	ORD INV. (NW)=139.80	-	N: 1334548.4101' E: 652761.2783'
	YD-107	PROPOSED	YARD DRAIN	142.03 (GRATE)	ORD INV. (NW)=139.80	-	N: 1334559.1224' E: 652776.7032'
	YD-108	PROPOSED	YARD DRAIN	141.62 (GRATE)	ORD INV. (SE)=139.10	-	N: 1334704.5237' 652746.8417'
	YD-109	PROPOSED	YARD DRAIN	141.62 (GRATE)	ORD INV. (SE)=138.51	-	N: 1334704.5237' E: 652684.0605'
	YD-110	PROPOSED	YARD DRAIN	141.62 (GRATE)	ORD INV. (SE)=137.91	-	N: 1334673.5638' E: 652621.2792'
	YD-111	PROPOSED	YARD DRAIN	141.62 (GRATE)	ORD INV. (SE)=137.32	-	N: 1334642.6040' E: 652558.4979'
	YD-112	PROPOSED	YARD DRAIN	141.62 (GRATE)	ORD INV. (SE)=137.10	-	N: 1334610.9808' E: 652494.3713'
	YD-113	PROPOSED	YARD DRAIN	141.62 (GRATE)	ORD INV. (SE)=137.10	-	N: 1334585.5495' E: 652442.8010'
	YD-114	PROPOSED	YARD DRAIN	141.62 (GRATE)	ORD INV. (SE)=137.10	-	N: 1334554.1474' E: 652379.1228'

NOTE: ALL ELEVATIONS IN FEET NAVD88

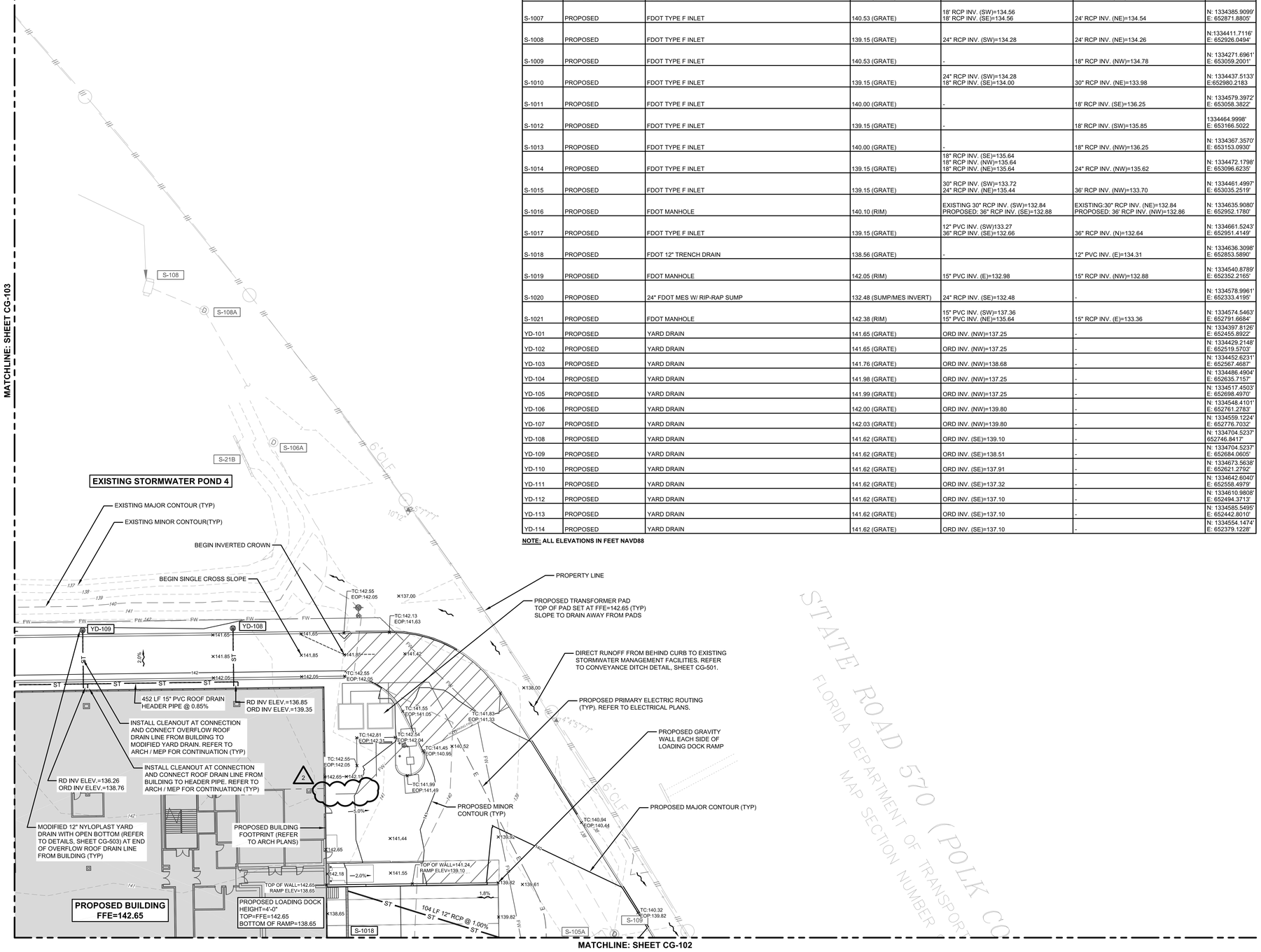

KEY MAP

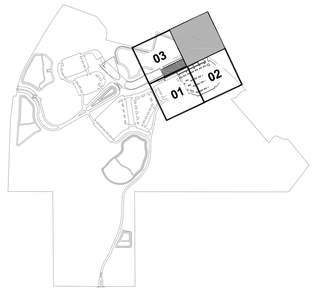

GRADING AND DRAINAGE LEGEND

- PROPERTY LINE
- EXISTING WETLAND JURISDICTION LINE
- WETLAND SETBACK LINE
- EXISTING MAJOR CONTOUR
- EXISTING MINOR CONTOUR
- PROPOSED MAJOR CONTOUR
- PROPOSED MINOR CONTOUR
- PROPOSED YARD DRAIN
- PROPOSED FDOT TYPE 'F' INLET
- PROPOSED STORM JUNCTION BOX
- ×140.83 PROPOSED SPOT ELEVATION
- PROPOSED FLOW DIRECTION

NOTES:

- REFER TO UTILITY PLANS (SHEETS CU-101 THROUGH CU-104) FOR PROPOSED STORM AND ROOF DRAIN INFORMATION AND ADDITIONAL GRADING DETAIL.
- REFER TO ARCHITECTURAL, MECHANICAL, AND PLUMBING DRAWINGS FOR ADDITIONAL INFORMATION ON PROPOSED ROOF DRAIN AND UTILITY CONNECTION LOCATIONS AND DETAILS.
- REFER TO STRUCTURE TABLE, SHEET CG-104, FOR EXISTING AND PROPOSED STRUCTURE DETAILS.
- REFER TO GRADING AND DRAINAGE DETAILS, SHEETS CG-501 THROUGH CG-504.
- EXISTING STRUCTURE INFORMATION PROVIDED BY TOPOGRAPHIC SURVEY BY POLARIS ASSOCIATES INC. DATED 06/27/19.
- VERTICAL DATUM: NORTH AMERICAN VERTICAL DATUM 1988 (NAVD88). ALL EXISTING AND PROPOSED ELEVATIONS DEPICTED ARE IN FEET NAVD88 (UNLESS OTHERWISE NOTED). TO OBTAIN NATIONAL GEODETIC VERTICAL DATUM 1929 (NGVD29), ADD 0.85 FT TO ELEVATIONS IN NAVD88.
- MAINTAIN MINIMUM HORIZONTAL AND VERTICAL CLEARANCES AT ALL TIMES BETWEEN EXISTING AND PROPOSED FACILITIES. IF MINIMUM CLEARANCES CANNOT BE ACHIEVED, CONTRACTOR SHALL BRING THE CONFLICT TO THE ATTENTION OF THE ENGINEER.
- EXISTING UTILITY AND STORM INFORMATION ARE APPROXIMATE. CONTRACTOR IS RESPONSIBLE FOR FIELD VERIFYING ALL EXISTING CONDITIONS PRIOR TO CONSTRUCTION.
- ALL SWALES, DITCHES, AND OTHER DRAINAGE CONVEYANCE SYSTEMS SHALL BE KEPT CLEAR OF OBSTRUCTIONS BY ALL LANDSCAPING EXCEPT SOD.

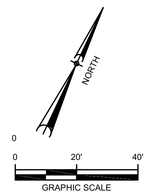

AECOM
BATSON-COOK CONSTRUCTION

PROJECT

PUBLIX HEADQUARTERS BUILDING ADDITION AND PARKING LOT EXPANSION

3300 PUBLIX CORPORATE PARKWAY
LAKELAND, FL 33811

CLIENT

Publix

3300 PUBLIX CORPORATE PARKWAY
LAKELAND, FL 33811

www.publix.com

CONSULTANT

AECOM

AECOM TECHNICAL SERVICES, INC.
800 Douglas Entrance
North Tower, 2nd Floor
Coral Gables, FL 33134
305.444.4691 tel 305.447.3580 fax
www.aecom.com

ARCHITECTURE
LICENSE NO. AA26000687

ENGINEERING
CA LIC. NO. 8115

www.aecom.com

REGISTRATION

DENNIS W. SYRJA
LICENSE
No. 43423
STATE OF FLORIDA
PROFESSIONAL ENGINEER

DENNIS W. SYRJA, PE
ENGINEER OF RECORD

NOTICE: THE OFFICIAL RECORD OF THIS SHEET IS THE ELECTRONIC FILE SIGNED AND SEALED UNDER RULE 61G15-23.004, F.A.C.

THIS ITEM HAS BEEN DIGITALLY SIGNED AND SEALED BY DENNIS W. SYRJA, P.E. ON THE DATE ADJACENT TO THE SEAL.

PRINTED COPIES OF THIS DOCUMENT ARE NOT CONSIDERED SIGNED AND SEALED AND THE SIGNATURE MUST BE VERIFIED ON ANY ELECTRONIC COPIES.

ASI 5
BCC Received 5.20.2020

ISSUE/REVISION

I/R	DATE	DESCRIPTION
2	MAY 19, 2020	SI #005
1	SEP 20, 2019	100% CONSTRUCTION DOCUMENTS
0	AUG 23, 2019	CONSTRUCTION DOCUMENTS

PROJECT NUMBER

60601397

SHEET TITLE

GRADING & DRAINAGE PLANS

SHEET NUMBER

CG-104

©2016 AECOM Corporation

Last Plotted: 5/19/2020 7:45:04 PM
Filename: S:\PROJECTS_CIVIL\PROJECTS\PUBLIX\600LDV\GS\600-CAD_BIM (CIVIL)\20-SHEETS\CCG-101 GRADING DRAINAGE PLANS.DWG

Printed on ___% Post-Consumer Recycled Content Paper