Building Inspection Division
Lakeland
THESE PLANS HAVE BEEN REVIEWED FOR COMPLIANCE WITH THE CURRENT EDITION OF THE FLORIDA BUILDING CODE OR THE CITY OF LAKELAND LAND DEVELOPMENT CODE
Date: 07/16/20
Permit Number: BLD19-06035

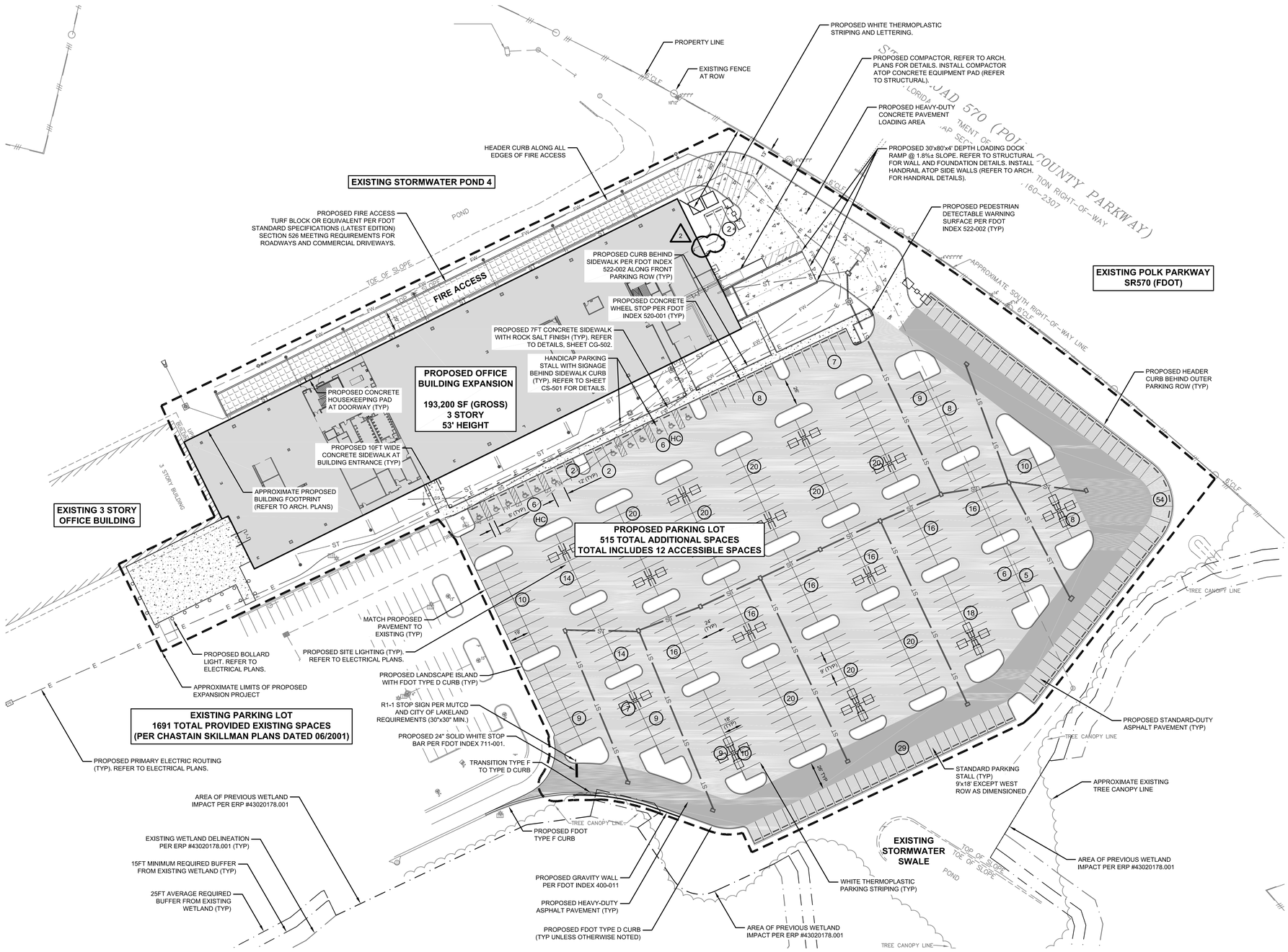

KEY MAP

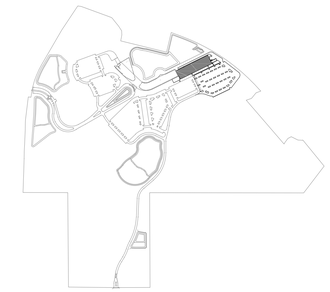

SITE / PAVING LEGEND

- PROPERTY LINE
- PROPOSED PROJECT LIMITS
- EXISTING WETLAND JURISDICTION LINE
- WETLAND SETBACK LINE
- PROPOSED HEAVY-DUTY ASPHALT PAVEMENT
- PROPOSED STANDARD-DUTY ASPHALT PAVEMENT
- PROPOSED CONCRETE PAVEMENT
- PROPOSED CONCRETE SIDEWALK
- PROPOSED TURF BLOCK OR EQUIVALENT. SEE FIRE ACCESS CALLOUT THIS SHEET.

*LEGAL DESCRIPTION:
A PARCEL OF LAND IN SECTIONS 33 AND 34, TOWNSHIP 28 SOUTH, RANGE 23 EAST, POLK COUNTY, FLORIDA, BEING MORE PARTICULARLY DESCRIBED AS FOLLOWS: FOR A POINT OF REFERENCE, COMMENCE AT THE SOUTHWEST CORNER OF SAID SECTION 33; THENCE S 89°54'14" E ALONG THE SOUTH LINE OF THE SOUTHWEST 1/4 OF SAID SECTION 33 (BASIS OF BEARINGS), A DISTANCE OF 2023.36 FEET TO A POINT ON THE EAST LINE OF THE PLAT OF DMG COMPLEX, AS RECORDED IN PLAT BOOK 77, PAGE 43 OF THE PUBLIC RECORDS OF SAID POLK COUNTY, AND THE POINT OF BEGINNING OF THE HEREIN DESCRIBED PARCEL; THENCE N 0°23'08" W, ALONG SAID EAST LINE, A DISTANCE OF 1325.66 FEET TO THE NORTHEAST CORNER OF SAID DMG COMPLEX, THENCE N 89°54'40" W, ALONG THE NORTH LINE OF SAID DMG COMPLEX, A DISTANCE OF 651.84 FEET TO THE CENTERLINE OF AIRPORT ROAD; THENCE N 01°41'57" E, ALONG SAID CENTERLINE, A DISTANCE OF 1572.81 FEET; THENCE N 33°48'58" E, CONTINUING ALONG SAID CENTERLINE, A DISTANCE OF 594.65 FEET; THENCE S 56°18'18" E, A DISTANCE OF 56.11 FEET TO THE SOUTHERN TERMINUS OF THE LIMITED ACCESS RIGHT-OF-WAY LINE FOR AIRPORT ROAD AS SHOWN ON THE FLORIDA DEPARTMENT OF TRANSPORTATION'S PROPOSED PLANS FOR THE POLK COUNTY PARKWAY; THENCE N 33°41'42" E ALONG SAID LIMITED ACCESS RIGHT-OF-WAY LINE, A DISTANCE OF 659.91 FEET TO THE SOUTHERLY LIMITED ACCESS RIGHT-OF-WAY LINE FOR THE PROPOSED POLK COUNTY PARKWAY; THENCE EASTERLY ALONG SAID SOUTHERLY LIMITED ACCESS RIGHT-OF-WAY LINE, THE FOLLOWING COURSES: THENCE S 81°56'46" E, A DISTANCE OF 48.53 FEET; THENCE S 69°52'09" E, A DISTANCE OF 444.78 FEET; THENCE S 47°25'56" E, A DISTANCE OF 17.53 FEET; THENCE S 39°31'30" E, A DISTANCE OF 79.48 FEET; THENCE S 38°44'12" E, A DISTANCE OF 58.31 FEET; THENCE S 32°46'31" E, A DISTANCE OF 77.85 FEET; THENCE S 3°36'20" E, A DISTANCE OF 57.03 FEET; THENCE S 10°32'59" W, A DISTANCE OF 85.71 FEET; THENCE S 76°12'57" E, A DISTANCE OF 652.30 FEET; THENCE N 13°26'20" E, A DISTANCE OF 280.50 FEET; THENCE S 69°51'05" E, A DISTANCE OF 139.12 FEET TO THE POINT OF CURVATURE OF A CURVE, CONCAVE SOUTHERLY AND HAVING A RADIUS OF 2714.79 FEET; THENCE EASTERLY ALONG THE ARC OF SAID CURVE THROUGH A CENTRAL ANGLE OF 28°45'38" AND AN ARC DISTANCE OF 1362.73 FEET (CB = S 55°28'16" E, CD = 1348.47 FEET); THENCE S 69°44'02" W, A DISTANCE OF 68.60 FEET; THENCE S 39°56'26" W, A DISTANCE OF 101.30 FEET; THENCE S 70°53'35" W, A DISTANCE OF 76.14 FEET; THENCE S 40°51'05" E, A DISTANCE OF 802.66 FEET; THENCE N 22°26'58" E, A DISTANCE OF 17.31 FEET; THENCE N 36°54'32" E, A DISTANCE OF 76.03 FEET; THENCE N 62°13'23" E, A DISTANCE OF 53.15 FEET; THENCE S 63°14'03" E, A DISTANCE OF 104.76 FEET; THENCE S 87°44'26" E, A DISTANCE OF 61.09 FEET; THENCE N 50°46'57" E, A DISTANCE OF 6.37 FEET; THENCE S 39°13'03" E, A DISTANCE OF 467.07 FEET; THENCE DEPARTING SAID SOUTHERLY LIMITED ACCESS RIGHT-OF-WAY LINE, S 37°21'18" W, A DISTANCE OF 466.87 FEET TO THE NORTHEAST CORNER OF THE SOUTHEAST 1/4 OF THE SOUTHEAST 1/4 OF SAID SECTION 33; THENCE N 89°54'15" W, A DISTANCE OF 2135.14 FEET TO THE NORTHWEST CORNER OF THE EAST 150.00 FEET OF THE WEST 1/2 OF THE SOUTHWEST 1/4 OF THE SOUTHEAST 1/4 OF SAID SECTION 33; THENCE S 00°17'12" E, A DISTANCE OF 1335.85 FEET TO THE SOUTHWEST CORNER OF THE EAST 150.00 FEET OF THE WEST 1/2 OF THE SOUTHWEST 1/4 OF THE SOUTHEAST 1/4 OF SAID SECTION 33; THENCE N 89°53'24" W, A DISTANCE OF 511.00 FEET TO THE SOUTHEAST CORNER OF THE SOUTHWEST 1/4 OF SAID SECTION 33; THENCE N 89°54'14" W, ALONG THE SOUTH LINE OF THE SOUTHWEST 1/4 OF SAID SECTION 33, A DISTANCE OF 620.54 FEET TO THE SAID POINT OF BEGINNING OF THE HEREIN DESCRIBED PARCEL. ALSO LESS THE MAINTAINED RIGHT-OF-WAY FOR AIRPORT ROAD AS RECORDED IN POLK COUNTY MAP BOOK 5, PAGES 113-117, ALSO LESS ROAD RIGHT-OF-WAY FOR STATE ROAD 570.

NOTES:

- REFER TO ARCHITECTURAL, STRUCTURAL, ELECTRICAL, LIGHTING, MECHANICAL, PLUMBING, FIRE PROTECTION, AND LANDSCAPE PLANS FOR FURTHER INFORMATION AND DETAILS.
- REFER TO SHEET CS-100 FOR OVERALL SITE PLAN OF THE PUBLIX CORPORATE HEADQUARTERS FACILITY.
- REFER TO SHEET CS-102 FOR ENLARGED PLAN VIEW OF PROPOSED LOADING AREA.
- REFER TO PAVING GRADING DRAINAGE DETAILS, SHEET CG-503, FOR PROPOSED PAVEMENT SECTIONS.
- ALL PROPOSED CONCRETE SIDEWALK TO HAVE ROCK SALT FINISH UNLESS OTHERWISE NOTED. REFER TO DETAIL, SHEET CG-502.
- REFER TO SITE DETAILS, SHEET CS-501, FOR ADDITIONAL NOTES AND DETAILS.
- CONTRACTOR SHALL SUBMIT A JOINTING PLAN ILLUSTRATING ALL SAWCUTS AND CONSTRUCTION JOINTS (NOT TO EXCEED 15' CENTERS).

SITE DATA TABLE

PROJECT NAME	PUBLIX CORPORATE HEADQUARTERS PHASE 2 EXPANSION
PARCEL ID NUMBER	23-28-33-000000-012010
STREET ADDRESS	3300 PUBLIX CORPORATE PARKWAY, LAKELAND, FLORIDA 33811
LEGAL DESCRIPTION	*REFER TO LEGAL DESCRIPTION, THIS SHEET
SECTION/TOWNSHIP/RANGE	33,34/ 28S/ 23E
OWNER INFORMATION	PUBLIX SUPER MARKETS INC.
OVERALL SITE/PROPERTY AREA	197.10 AC
CURRENT ZONING	PUD 4155 (OFFICE)
LAND USE	PUD-30
INSIDE CITY LIMITS?	YES - INSIDE CITY LIMITS
FEMA PANEL NUMBER	12105C0294G
PROJECT FLOOD ZONE	ZONE X
APPROXIMATE PROJECT AREA	SEE BELOW
PROPOSED FINISHED FLOOR ELEVATION (FFE)	142.65 FT-NAVD88
PROPOSED BUILDING HEIGHT	53FT
PROPOSED BUILDING NUMBER OF FLOORS	3
PROPOSED BUILDING GROSS FLOOR AREA	193,206 SF
PROPOSED FLOOR AREA RATIO (FAR)	[316,161 SF (EX) + 193,206 SF (PROP) = 509,367 SF] / 197.10 AC = 0.059
PROPOSED BUILDING USE	OFFICE
MINIMUM SETBACK REQUIREMENTS:	
MINIMUM BUILDING SETBACK (POLK PARKWAY)	65FT (80FT PROVIDED)
SITE AREAS WITHIN PROJECT LIMITS:	
TOTAL PROJECT AREA	8.25 AC
BUILDING FOOTPRINT AREA	1.48 AC
PROPOSED PAVEMENT AREA	4.97 AC
TOTAL IMPERVIOUS AREA	6.45 AC
TOTAL PERVIOUS AREA	1.80 AC

SITE DATA TABLE (CONT.)

PARKING DATA:	
PARKING REQUIRED IN EX. CONDITION (PUD PH 1)	(316,161 SF) * (1 SPACE / 200 SF) = 1581 SPACES
EXISTING ONSITE PARKING	1691 SPACES (PER CHASTAIN SKILLMAN PLANS DATED 06/2001)
(EXISTING PARKING SURPLUS)	(1691 SPACES - 1581 SPACES = 110 SPACES)
PARKING REQUIRED (CURRENT PROJECT - PUD PH 2 AND 3)	(193,206 SF) * (1 SPACE / 300 SF) = 645 SPACES
ACCESSIBLE PARKING REQUIRED (CURRENT PROJECT)	(515 SPACES PROVIDED) * (2%) = 11 SPACES
PROPOSED ADDITIONAL PARKING	515 SPACES
PROPOSED ADDITIONAL ACCESSIBLE PARKING	12 SPACES
TOTAL PARKING REQUIRED IN PROPOSED CONDITION	1581 SPACES + 645 SPACES = 2226 SPACES
TOTAL ONSITE PARKING IN PROPOSED CONDITION	1691 + 515 = 2206 SPACES 2226 SPACES (REQD) - 2206 SPACES (PROP) = 20 SPACES 20 SPACES / 2226 SPACES = 9.0% < 10% DEVIATION
UTILITY PROVIDERS	
WATER	CITY OF LAKELAND WATER UTILITIES
SANITARY SEWER	CITY OF LAKELAND WATER UTILITIES
NATURAL GAS	TECO PEOPLES GAS
POWER	LAKELAND ELECTRIC
COMMUNICATIONS	-
FIRE PROTECTION	CITY OF LAKELAND WATER UTILITIES
STORMWATER MANAGEMENT	CONNECTION TO EXISTING ONSITE STORMWATER CONVEYANCE SYSTEM AND STORMWATER MANAGEMENT FACILITIES
OWNER	NAME: PUBLIX SUPER MARKETS INC. ADDRESS: 3300 PUBLIX CORPORATE PKWY, LAKELAND, FL 33811

SITE DATA TABLE (CONT.)

CIVIL ENGINEER	NAME: AECOM TECHNICAL SERVICES, INC. CONTACT: DENNIS W. SYRJA, P.E. ADDRESS: 7650 WEST COURTNEY CAMPBELL CAUSEWAY SUITE 700 EMAIL: dennis.syrja@aecom.com TEL: 813.286.1711 FAX: 813.287.8591
CONTRACTOR	NAME: BATSON-COOK CONSTRUCTION CONTACT: DON FARRIS ADDRESS: 1101 CHANNELSIDE DRIVE, SUITE 401, TAMPA, FL 33602 EMAIL: dfarris@batson-cook.com TEL: 813.221.7575 FAX: 813.221.7575 EMERGENCY PHONE NUMBER: 813.690.4369
PROJECT SURVEYORS	TOPOGRAPHIC SURVEY: NAME: POLARIS ASSOCIATES, INC. CONTACT: DAN H. RIZZUTO, PLS ADDRESS: 2165 SUNNYDALE BLVD. SUITE D, CLEARWATER, FL 33765 EMAIL: dhr@polaris-survey.com TEL: 727.461.6113 FAX: 727.461.6669 BOUNDARY SURVEY: EMAIL: CHASTAIN-SKILLMAN, INC. ADDRESS: 4705 OLD HIGHWAY 37, P.O. BOX 5710, LAKELAND, FLORIDA EMAIL: 941.646.1402
ARCHITECT/MEP/STRUCTURAL ENGINEER/LANDSCAPE ARCHITECT	NAME: AECOM TECHNICAL SERVICES, INC. ADDRESS: 800 DOUGLAS ENTRANCE, NORTH TOWER 2ND FLOOR, CORAL GABLES, FLORIDA 33134 TEL: 305.444.4691 FAX: 305.447.3580

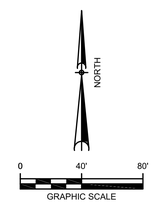

AECOM
BATSON-COOK CONSTRUCTION

PROJECT

PUBLIX HEADQUARTERS BUILDING ADDITION AND PARKING LOT EXPANSION

3300 PUBLIX CORPORATE PARKWAY
LAKELAND, FL 33811

CLIENT

Publix
3300 PUBLIX CORPORATE PARKWAY
LAKELAND, FL 33811

www.publix.com

CONSULTANT

AECOM

AECOM TECHNICAL SERVICES, INC.
800 Douglas Entrance
North Tower, 2nd Floor
Coral Gables, FL 33134
305.444.4691 tel 305.447.3580 fax
www.aecom.com

ARCHITECTURE
LICENSE NO. AA26000687

ENGINEERING
CA LIC. NO. 8115

www.aecom.com

REGISTRATION

DENNIS W. SYRJA
LICENSE
No. 43423
STATE OF FLORIDA
PROFESSIONAL ENGINEER

DENNIS W. SYRJA, P.E.
ENGINEER OF RECORD

NOTICE: THE OFFICIAL RECORD OF THIS SHEET IS THE ELECTRONIC FILE SIGNED AND SEALED UNDER RULE 61G15-23.004, F.A.C.

THIS ITEM HAS BEEN DIGITALLY SIGNED AND SEALED BY DENNIS W. SYRJA, P.E. ON THE DATE ADJACENT TO THE SEAL.

PRINTED COPIES OF THIS DOCUMENT ARE NOT CONSIDERED SIGNED AND SEALED AND THE SIGNATURE MUST BE VERIFIED ON ANY ELECTRONIC COPIES.

ASI 5
BCC Received 5.20.2020

ISSUE/REVISION

I/R	DATE	DESCRIPTION
2	MAY 19, 2020	SI #005
1	SEP 20, 2019	100% CONSTRUCTION DOCUMENTS
0	AUG 23, 2019	CONSTRUCTION DOCUMENTS

PROJECT NUMBER

60601397

SHEET TITLE

SITE AND PAVING PLAN

SHEET NUMBER

CS-101

Last Plotted: 5/19/2020 6:01:04 PM
Filename: S:\PROJECTS_CIVIL\PROJECTS\PUBLIX\900-DWG\900-CAD_BIM (CIVIL)\20-SHEETS\CCS-101 SITE PLAN.DWG
Printed on ___% Post-Consumer Recycled Content Paper
©2016 AECOM Corporation