Code 541 SEE CRM FOR PLANS Class "A"

HARRIS COUNTY

COMMERCIAL PERMIT APPLICATION

1. APPLICANT INFORMATION (Please print or type) PROJECT # 2009269 (CIVIL); _____ (FIRE)

Applicant Name PALMETTO TRANSOCEANIC, LLC

Applicant Mailing Address PO BOX 2311 City SPRING State TX Zip 77383-2311

E-Mail _____ Daytime Phone ~~713-539-8583~~ 281-355-3600 Fax 281-355-3696 Cell 713-539-8583

Property Owner Name PALMETTO TRANS OCEANIC Phone 281-355-3600

Property Owner's Mailing Address PO BOX 2311 City SPRING State TX Zip 77383-2311

2. LOCATION OF PROPERTY

Subdivision Springwoods Village Delta (1) Section _____ Block _____ Lot _____ Reserve _____

Street Address 23155 I-45 Site Zip Code 77373

Survey Name J. MOORE SURVEY/ [redacted] 583/ 243 239

Property Tax Account Number [redacted]

3. CONSTRUCTION INFORMATION

☐ Professional or Mercantile Building ☐ Public Works, Sewer & Water Plant Bldgs ☐ Multi-Family Bldg ____ Units ____

☐ Industrial Building ☐ Sand Pit, Sanitary Landfill, Cut & Fill ____ CuYds ☐ Mobile ~~Home~~ Park, Units ____

☐ Organized Sewer, Water System ☐ ing ☒ Other Non-Residential Development 500 Trailer #1

Project Name _____ Describe the use of the proposed development _____

Estimated Cost of Construction $ 384,000.00 Square Footage: 60720 ft

4. SEWERAGE AND WATER SYSTEM

☐ Public Water & Sewer System ☒ Private Water & Sewer System ☐ Water Well

☒ Utility District Name TBD ☐ Existing Septic, Year Installed _____ ☐ Proposed Septic

5. DRIVEWAY (Curb Cut ONLY): ☐ Existing Driveway, no new construction or add-on ☐ Private Road, Not County Maintained

☐ New Installation: No. of approaches ____ ☐ Concrete ☐ Asphalt ☐ Gravel Width at Property Line _____

6. FIRE SAFETY ☐ Commercial Activity ☐ Accessible to the Public ☐ Hazardous Materials

ATTACH TWO SITE PLANS OR SURVEYS (to scale) SHOWING ALL PROPOSED IMPROVEMENTS INCLUDING DRIVEWAY(S) FOR PRELIMINARY REVIEW, MORE DETAILED DRAWINGS MAY BE REQUIRED BEFORE A PERMIT CAN BE ISSUED.

All development and driveway construction must be completed in accordance with the Regulations of Harris County, Texas for Flood Plain Management (Adopted 8-28-97) and the Regulations of Harris County for the Construction of Driveways and/or Culverts on County Easements and Rights of Way. This application is valid only for property located in the Unincorporated Areas of Harris County, Texas.

The Applicant hereby acknowledges and agrees to be strictly bound to Commissioners' Court of Harris County in ensuring that all provisions, conditions and requirements attached to the issuance of the development permit(s) under the Regulations of Harris County, Texas for Flood Plain Management and driveway permit(s) under the Regulations of Harris County for the Construction of Driveways and/or Culverts on County Easements and Rights of Way will be faithfully and fully complied with.

The permit applicant understands and agrees that the County Engineer may make scheduled or unscheduled inspections of the property upon the issuance of the permit. The applicant acknowledges that the driveway construction must be inspected before the concrete is poured and after it is finished. The applicant is aware that pursuant to Chapter 352 of the Texas Local Government Code, the County Fire Marshal may, in the interest of safety and fire prevention, inspect certain structures for fire hazards. If the permit applicant is a corporation, partnership or other legal entity other than a natural person, then the undersigned acting as the authorized representative of said entity will be responsible for ensuring the entity's compliance with all provisions, conditions and requirements of the development and driveway permit.

I, LEE PARKER, the undersigned have carefully reviewed this application and my answers to all questions. To the best of my knowledge, the answers are all true and correct.

SIGNATURE of Applicant/Agent or Attorney _____ Date 1/31/11

Receiving	Planchecking	Records	Date Application Received
Applicant No. 103783	Planchecker	Dev # 1-0383730-7	Received JAN 31 2011 Harris County
Request No. 300834	Ap APPROVED By Darrell Hahn at 8:03 am, Feb 01, 2011	D/W#	
Property No. 3216743	Date	D/W#	
Clerk & Date LFE 1/31/11	Vio No.	Receipt No.	

Code 600

HARRIS COUNTY

COMMERCIAL PERMIT APPLICATION

1. APPLICANT INFORMATION (Please print or type) PROJECT # 2009269 (CIVIL); _____ (FIRE)

Applicant Name PALMETTO TRANSLOEARVIL, LLC

Applicant Mailing Address PO BOX 2311 City SPRING State TX Zip 77383-2311

E-Mail _____ Daytime Phone ~~713-539-8583~~ 281-355-3600 Fax 281-355-3696 Cell 713-539-8583

Property Owner Name PALMETTO TRANS OLEARVIL Phone 281-355-3600

Property Owner's Mailing Address PO BOX 2311 City SPRING State TX Zip 77383-2311

2. LOCATION OF PROPERTY

Subdivision Springwoods Village Delta (1) Section _____ Block _____ Lot _____ Reserve _____

Street Address 23155 I-45 Site Zip Code 77373

Survey Name J. MOORE SURVEY/P. LIMSKY SURVEY Abstract Number 583 Acreage 243.3239

Property Tax Account Number [redacted]

3. CONSTRUCTION INFORMATION

☐ Professional or Mercantile Building ☐ Public Works, Sewer & Water Plant Bldgs ☐ Multi-Family Bldg ____ Units ____

☐ Industrial Building ☐ Sand Pit, Sanitary Landfill, Cut & Fill ____ CuYds ☐ Mobile Home Park, Units ____

☐ Organized Sewer, Water System ☐ ing ☒ Other Non-Residential Development Bridge (Road A) (East)

Project Name _____ Describe the use of the proposed development bridge w/ Retaining Wall

Estimated Cost of Construction $ 6,000,000.00 Square Footage: _____

4. SEWERAGE AND WATER SYSTEM

☐ Public Water & Sewer System ☒ Private Water & Sewer System ☐ Water Well

☒ Utility District Name TBD ☐ Existing Septic, Year Installed _____ ☐ Proposed Septic

5. DRIVEWAY (Curb Cut ONLY): ☐ Existing Driveway, no new construction or add-on ☐ Private Road, Not County Maintained

☐ New Installation: No. of approaches ____ ☐ Concrete ☐ Asphalt ☐ Gravel Width at Property Line _____ _____ _____

6. FIRE SAFETY ☐ Commercial Activity ☐ Accessible to the Public ☐ Hazardous Materials

ATTACH TWO SITE PLANS OR SURVEYS (to scale) SHOWING ALL PROPOSED IMPROVEMENTS INCLUDING DRIVEWAY(S) FOR PRELIMINARY REVIEW, MORE DETAILED DRAWINGS MAY BE REQUIRED BEFORE A PERMIT CAN BE ISSUED.

All development and driveway construction must be completed in accordance with the Regulations of Harris County, Texas for Flood Plain Management (Adopted 8-28-97) and the Regulations of Harris County for the Construction of Driveways and/or Culverts on County Easements and Rights of Way. This application is valid only for property located in the Unincorporated Areas of Harris County, Texas.

The Applicant hereby acknowledges and agrees to be strictly bound to Commissioners' Court of Harris County in ensuring that all provisions, conditions and requirements attached to the issuance of the development permit(s) under the Regulations of Harris County, Texas for Flood Plain Management and driveway permit(s) under the Regulations of Harris County for the Construction of Driveways and/or Culverts on County Easements and Rights of Way will be faithfully and fully complied with.

The permit applicant understands and agrees that the County Engineer may make scheduled or unscheduled inspections of the property upon the issuance of the permit. The applicant acknowledges that the driveway construction must be inspected before the concrete is poured and after it is finished. The applicant is aware that pursuant to Chapter 352 of the Texas Local Government Code, the County Fire Marshal may, in the interest of safety and fire prevention, inspect certain structures for fire hazards. If the permit applicant is a corporation, partnership or other legal entity other than a natural person, then the undersigned acting as the authorized representative of said entity will be responsible for ensuring the entity's compliance with all provisions, conditions and requirements of the development and driveway permit.

I, LEE PARKER, the undersigned have carefully reviewed this application and my answers to all questions. To the best of my knowledge, the answers are all true and correct.

SIGNATURE of Applicant/Agent or Attorney _____ Date 1/31/11

Receiving	Planchecking	Records	Date Application Received
Applicant No. 103783	Planchecker	Dev # 1-0383731-0	Received JAN 31 2011 Harris County
Request No. 300834	APPROVED By Darrell Hahn at 8:03 am, Feb 01, 2011	D/W#	
Property No. 326243	Date	D/W#	
Clerk & Date LFE 1/31/11	Vio No.	Receipt No.	

Code-600

HARRIS COUNTY

COMMERCIAL PERMIT APPLICATION

1. APPLICANT INFORMATION (Please print or type) PROJECT # 2009269 (CIVIL); _____ (FIRE)

Applicant Name PALMETTO TRANSOCEANIC, LLC

Applicant Mailing Address PO BOX 2311 City SPRING State TX Zip 77383-2311

E-Mail _____ Daytime Phone ~~713-539-8583~~ 281-355-3600 Fax 281-355-3696 Cell 713-539-8583

Property Owner Name PALMETTO TRANS OCEANIC Phone 281-355-3600

Property Owner's Mailing Address PO BOX 2311 City SPRING State TX Zip 77383-2311

2. LOCATION OF PROPERTY

Subdivision Spring Woods Village Delta (1) Section _____ Block _____ Lot _____ Reserve _____

Street Address 23155 I-45 Site Zip Code 77373

Survey Name J. MOORE SURVEY / P. LIMSKY SURVEY Abstract Number 583 Acreage 243.3239

Property Tax Account Number [redacted]

3. CONSTRUCTION INFORMATION

☐ Professional or Mercantile Building ☐ Public Works, Sewer & Water Plant Bldgs ☐ Multi-Family Bldg ____ Units ____ (West)

☐ Industrial Building ☐ Sand Pit, Sanitary Landfill, Cut & Fill ____ CuYds ☐ Mobile Home Park, Units ____

☐ Organized Sewer, Water System ☐ Other Non-Residential Development Bridge (Road D)

Project Name _____ Describe the use of the proposed development bridge w/ retaining wall

Estimated Cost of Construction $ 2,000,000.00 Square Footage: _____

4. SEWERAGE AND WATER SYSTEM

☐ Public Water & Sewer System ☒ Private Water & Sewer System ☐ Water Well

☒ Utility District Name TBD ☐ Existing Septic, Year Installed _____ ☐ Proposed Septic

5. DRIVEWAY (Curb Cut ONLY): ☐ Existing Driveway, no new construction or add-on ☐ Private Road, Not County Maintained

☐ New Installation: No. of approaches ____ ☐ Concrete ☐ Asphalt ☐ Gravel Width at Property Line _____ _____ _____

6. FIRE SAFETY ☐ Commercial Activity ☐ Accessible to the Public ☐ Hazardous Materials

ATTACH TWO SITE PLANS OR SURVEYS (to scale) SHOWING ALL PROPOSED IMPROVEMENTS INCLUDING DRIVEWAY(S) FOR PRELIMINARY REVIEW, MORE DETAILED DRAWINGS MAY BE REQUIRED BEFORE A PERMIT CAN BE ISSUED.

All development and driveway construction must be completed in accordance with the Regulations of Harris County, Texas for Flood Plain Management (Adopted 8-28-97) and the Regulations of Harris County for the Construction of Driveways and/or Culverts on County Easements and Rights of Way. This application is valid only for property located in the Unincorporated Areas of Harris County, Texas.

The Applicant hereby acknowledges and agrees to be strictly bound to Commissioners' Court of Harris County in ensuring that all provisions, conditions and requirements attached to the issuance of the development permit(s) under the Regulations of Harris County, Texas for Flood Plain Management and driveway permit(s) under the Regulations of Harris County for the Construction of Driveways and/or Culverts on County Easements and Rights of Way will be faithfully and fully complied with.

The permit applicant understands and agrees that the County Engineer may make scheduled or unscheduled inspections of the property upon the issuance of the permit. The applicant acknowledges that the driveway construction must be inspected before the concrete is poured and after it is finished. The applicant is aware that pursuant to Chapter 352 of the Texas Local Government Code, the County Fire Marshal may, in the interest of safety and fire prevention, inspect certain structures for fire hazards. If the permit applicant is a corporation, partnership or other legal entity other than a natural person, then the undersigned acting as the authorized representative of said entity will be responsible for ensuring the entity's compliance with all provisions, conditions and requirements of the development and driveway permit.

I, LEE PARKER, the undersigned have carefully reviewed this application and my answers to all questions. To the best of my knowledge, the answers are all true and correct.

SIGNATURE of Applicant/Agent or Attorney _____ Date 1/31/11

Receiving	Planchecking	Records	Date Application Received
Applicant No. 103783	Planchecker	Dev # 1-0383732-2	Received JAN 31 2011 Harris County
Request No. 300834	APPROVED By Darrell Hahn at 8:03 am, Feb 01, 2011	D/W#	
Property No. 326243	Date	D/W#	
Clerk & Date 1/31/11	Vio No.	Receipt No.	

Code 620 * HC-Free Code-CFCLS

HARRIS COUNTY

COMMERCIAL PERMIT APPLICATION

1. APPLICANT INFORMATION (Please print or type) PROJECT # 2009269 (CIVIL); _____ (FIRE)

Applicant Name PALMETTO TRANSOCEANIC, LLC

Applicant Mailing Address PO BOX 2311 City SPRING State TX Zip 77383-2311

E-Mail _____ Daytime Phone ~~713-539-8583~~ 281-355-3600 Fax 281-355-3696 Cell 713-539-8583

Property Owner Name PALMETTO TRANS OCEANIC Phone 281-355-3600

Property Owner's Mailing Address PO BOX 2311 City SPRING State TX Zip 77383-2311

2. LOCATION OF PROPERTY

Subdivision Springwoods Village Delta (1) Section _____ Block _____ Lot _____ Reserve _____

Street Address 23155 I-45 Site Zip Code 77373

Survey Name J. MOORE SURVEY/ELIMSKI SURVEY Abstract Number 583 Acreage 243.3239

Property Tax Account Number [redacted]

3. CONSTRUCTION INFORMATION

☐ Professional or Mercantile Building ☐ Public Works, Sewer & Water Plant Bldgs ☐ Multi-Family Bldg ____ Units ____

☐ Industrial Building ☐ Sand Pit, Sanitary Landfill, Cut & Fill ____ CuYds ☐ Mobile Home Park, Units ____

☐ Organized Sewer, Water System ☐ Building ☒ Other Non-Residential Development Tunnel System

Project Name _____ Describe the use of the proposed development _____

Estimated Cost of Construction $ 56,400,000.00 Square Footage: _____

4. SEWERAGE AND WATER SYSTEM

☐ Public Water & Sewer System ☒ Private Water & Sewer System ☐ Water Well

☒ Utility District Name TBD ☐ Existing Septic, Year Installed _____ ☐ Proposed Septic

5. DRIVEWAY (Curb Cut ONLY): ☐ Existing Driveway, no new construction or add-on ☐ Private Road, Not County Maintained

☒ New Installation: No. of approaches 1 ☐ Concrete ☐ Asphalt ☐ Gravel Width at Property Line 36'

6. FIRE SAFETY ☐ Commercial Activity ☐ Accessible to the Public ☐ Hazardous Materials

ATTACH TWO SITE PLANS OR SURVEYS (to scale) SHOWING ALL PROPOSED IMPROVEMENTS INCLUDING DRIVEWAY(S) FOR PRELIMINARY REVIEW, MORE DETAILED DRAWINGS MAY BE REQUIRED BEFORE A PERMIT CAN BE ISSUED.

All development and driveway construction must be completed in accordance with the Regulations of Harris County, Texas for Flood Plain Management (Adopted 8-28-97) and the Regulations of Harris County for the Construction of Driveways and/or Culverts on County Easements and Rights of Way. This application is valid only for property located in the Unincorporated Areas of Harris County, Texas.

The Applicant hereby acknowledges and agrees to be strictly bound to Commissioners' Court of Harris County in ensuring that all provisions, conditions and requirements attached to the issuance of the development permit(s) under the Regulations of Harris County, Texas for Flood Plain Management and driveway permit(s) under the Regulations of Harris County for the Construction of Driveways and/or Culverts on County Easements and Rights of Way will be faithfully and fully complied with.

The permit applicant understands and agrees that the County Engineer may make scheduled or unscheduled inspections of the property upon the issuance of the permit. The applicant acknowledges that the driveway construction must be inspected before the concrete is poured and after it is finished. The applicant is aware that pursuant to Chapter 352 of the Texas Local Government Code, the County Fire Marshal may, in the interest of safety and fire prevention, inspect certain structures for fire hazards. If the permit applicant is a corporation, partnership or other legal entity other than a natural person, then the undersigned acting as the authorized representative of said entity will be responsible for ensuring the entity's compliance with all provisions, conditions and requirements of the development and driveway permit.

I, LEE PARKER, the undersigned have carefully reviewed this application and my answers to all questions. To the best of my knowledge, the answers are all true and correct.

SIGNATURE of Applicant/Agent or Attorney _____ Date 1/31/11

Receiving	Planchecking	Records	Date Application Received
Applicant No. 103783	Planchecker	Dev # 1-0383733-4	Received JAN 31 2011 Harris County
Request No. 300834	APPROVED By Darrell Hahn at 8:03 am, Feb 01, 2011	D/W# 3-0245384-2	
Property No. 326243	Date	D/W#	
Clerk & Date LFE 1/31/11	Vio No.	Receipt No.	

HARRIS COUNTY PUBLIC INFRASTRUCTURE DEPARTMENT
ARCHITECTURE & ENGINEERING DIVISION - PERMIT GROUP

CORRECTED
MAY 06 2014
COPY

REGULATIONS OF HARRIS COUNTY, TEXAS FOR FLOOD PLAIN MANAGEMENT
DEVELOPMENT PERMIT

STATE OF TEXAS }{
COUNTY OF HARRIS }{

DATE: 02/01/11
PERMIT NUMBER: 1-0383733-4

This CLASS II permit is issued to PALMETTO TRANSOCEANIC LLC, pursuant to Regulations of Harris County, Texas, for Flood Plain Management. This permit is not transferable and is effective immediately. Construction must be started within 180 days of the date the permit is issued or the permit shall be null and void. Upon written request, two six-month extensions may be obtained. However, if construction has not started at the time a revision occurs in the Flood Insurance Rate Map (FIRM), this permit is void and a new permit must be obtained.

Harris County has not examined title to the site designated in this Permit nor has Harris County determined whether the construction described in this Permit is in violation of or contrary to any deed restrictions or covenants applicable to said site. The determination that the work to be performed is not in violation of any deed restrictions or applicable covenants shall be the responsibility of the permittee.

This permit authorizes the permittee to develop the following described property in Harris County, Texas in strict accordance with the plans for development filed with the Application for this Permit.

BLOCK 1 OF SECTION 01
SUBDIVISION - SPRINGWOODS VILLAGE DELTA
22777 SPRINGWOODS VILLAGE PKWY TUN

OTHER NON-STRUCTURAL DEVELOPMENT

Work must not start until the permit issued herewith is posted at the building site. THE PERMITTEE MUST NOTIFY THE COUNTY ENGINEER WHENEVER WORK IS READY FOR THE INSPECTIONS REQUIRED BY THESE REGULATIONS. FAILURE TO COMPLY WITH THE REGULATIONS OF HARRIS COUNTY AND THE TERMS OF THIS PERMIT WILL RESULT IN LEGAL ACTION. Changes from the plans and specifications on file with the County Engineer must be approved by the County Engineer. The granting of this permit does not imply that the development can be insured by the Federal Flood Insurance Administration or that the development will be free from flooding.

The County Engineer may make scheduled or unscheduled inspections of the work in progress. Any work which does not comply with the plans and specifications filed with the application must be corrected or this Permit will be suspended or revoked.

THE JOBSITE COPY OF THIS PERMIT MUST BE POSTED IN A LOCATION PROTECTED FROM THE WEATHER AND SECURE FROM VANDALISM, AND KEPT POSTED UNTIL THE WORK IS COMPLETED. A SET OF APPROVED PLANS SUBMITTED WITH THE APPLICATION FOR THIS PERMIT MUST BE KEPT ON THE JOBSITE. NO REFUND IS ALLOWED ON EXPIRED, VOID OR CANCELED PERMITS, OR FOR INSPECTIONS THAT MAY HAVE BEEN CONDUCTED.

REPORT ALL VIOLATIONS TO COUNTY ENGINEER, AT (713) 956-3000.

http://hcpid.org/permits/

ADDENDUM ATTACHED

Permit Manager

COUNTY ENGINEER COPY

HARRIS COUNTY PUBLIC INFRASTRUCTURE DEPARTMENT
ARCHITECTURE & ENGINEERING DIVISION - PERMIT GROUP

CORRECTED
MAY 06 2014
COPY

REGULATIONS OF HARRIS COUNTY, TEXAS FOR FLOOD PLAIN MANAGEMENT
DEVELOPMENT PERMIT

STATE OF TEXAS }{
COUNTY OF HARRIS }{

DATE: 02/01/11
PERMIT NUMBER: 1-0383733-4

ADDENDUM

BLOCK 1 OF SECTION 01
SUBDIVISION - SPRINGWOODS VILLAGE DELTA
22777 SPRINGWOODS VILLAGE PKWY TUN
OTHER NON-STRUCTURAL DEVELOPMENT

REQUIRED INSPECTIONS

CFC LEV 5 - $1,000,001-$2.5M
AS-BUILT CERTIFICATE REQUIRED
FINAL INSPECTION - DEVELOPMENT

SPECIAL REQUIREMENTS

DEVELOPMENT TO BE COMPLETED IN ACCORDANCE W/ PLANS SUBMITTED
RIGHT OF WAY UTILITY WORK REQUIRES AUTHORIZATION NOTICE
SEE ATTACHED DISPOSITION REPORT FOR SPECIAL REQUIREMENTS.
TX REGISTERED ENGINEER MUST CERTIFY PROJECT WHEN COMPLETED
SCHEDULE INSPECTION(S) BY CALLING (713) 9 5 6 -3 0 3 5
THE COUNTY FIRE MARSHAL MAY MAKE SCHEDULED OR UNSCHEDULED
FIRE SAFETY INSPECTIONS OF THE COMPLETED STRUCTURE. ALL FIRE
HAZARDS WILL BE CORRECTED AT THE REQUEST OF THE FIRE MARSHAL
INSPECTION MUST BE REQUESTED BY ARCHITECT OR ENGINEER
FOR INSP,SUBMIT "REQUEST FOR FINAL INSP FORM"FROM F/C WEBSIT

Permit Manager

COUNTY ENGINEER COPY

CHANGE OF ADDRESS

Name Mara McCumber			A# 103583 P# 384493
Mailing Address 22903 Springwoods Village, Superior Trailer #105B			Mail ☐
City Houston	State TX	Zip 77389	REPRINT ☒
Hm Phone 979-777-9488	Wk Phone 281-355-3569		Clerk & Date 5/12/14
Fax N/A	Pager N/A		Fees Due $3

PROPERTY INFORMATION

Subdivision or Survey Name SPRINGWOODS VILLAGE DELTA SEC 1		
Section or Abstract Abstract 512 & Abstract 583	Block 1	Lot or Tract Unrestricted Reserved "A"
Incorrect Property Address: 23155 I-45 North, Spring, TX, 77373 (Delta - Infrastructure Package 1)		
Correct Property Address: (Obtain from Power Company) 22777 Springwoods Village Parkway, TUN, Spring, TX, 77389		

PERMITTEE'S ACKNOWLEDGEMENT OF DISCLAIMER REGARDING CHANGE OF ADDRESS

I, Mara McCumber, the undersigned hereby acknowledges that Harris County have my permission to correct the address on certain property in Harris County, Texas.

Signature: Mara McCumber

Print: Mara McCumber Date: 05/05/14

REQUEST FOR SERVICES

List all permits to be changed:	
1-038733-4 (HCPID) R-300884	

Note: If making an inquiry or requesting a service by mail, please include any applicable fees with your submittal. Personal checks are accepted. Cost for address correction: $3.00 per permit.

Code-693

Class "B"

HARRIS COUNTY

COMMERCIAL PERMIT APPLICATION

1. APPLICANT INFORMATION (Please print or type) PROJECT # 2009269 (CIVIL); _____ (FIRE)

Applicant Name PALMETTO TRANSOCEANIC, LLC

Applicant Mailing Address PO BOX 2311 City SPRING State TX Zip 77383-2311

E-Mail _____ Daytime Phone ~~713-539-8583~~ 281-355-3600 Fax 281-355-3696 Cell 713-539-8583

Property Owner Name PALMETTO TRANS OCEANIC Phone 281-355-3600

Property Owner's Mailing Address PO BOX 2311 City SPRING State TX Zip 77383-2311

2. LOCATION OF PROPERTY

Subdivision Springwoods Village Delta (1) Section _____ Block _____ Lot _____ Reserve _____

Street Address 23155 I-45 Site Zip Code 77373

Survey Name J. MOORE SURVEY / F. LIMSKY SURVEY Abstract Number 583 Acreage 243.3239

Property Tax Account Number [redacted]

3. CONSTRUCTION INFORMATION

☐ Professional or Mercantile Building ☐ Public Works, Sewer & Water Plant Bldgs ☐ Multi-Family Bldg ____ Units ____

☐ Industrial Building ☒ Sand Pit, Sanitary Landfill, Cut & Fill 3 CuYds ☐ Mobile Home Park, Units _____

☐ Organized Sewer, Water System ☐ Parking ☐ Other Non-Residential Development _____

Project Name _____ Describe the use of the proposed development Grading/Levelling/Fill for 109 Acres

Estimated Cost of Construction $ 14,400,000.00 Square Footage: _____

4. SEWERAGE AND WATER SYSTEM

☐ Public Water & Sewer System ☒ Private Water & Sewer System ☐ Water Well

☒ Utility District Name TBD ☐ Existing Septic, Year Installed _____ ☐ Proposed Septic

5. DRIVEWAY (Curb Cut ONLY): ☐ Existing Driveway, no new construction or add-on ☐ Private Road, Not County Maintained

☐ New Installation: No. of approaches ____ ☐ Concrete ☐ Asphalt ☐ Gravel Width at Property Line _____ _____ _____

6. FIRE SAFETY ☐ Commercial Activity ☐ Accessible to the Public ☐ Hazardous Materials

ATTACH TWO SITE PLANS OR SURVEYS (to scale) SHOWING ALL PROPOSED IMPROVEMENTS INCLUDING DRIVEWAY(S) FOR PRELIMINARY REVIEW, MORE DETAILED DRAWINGS MAY BE REQUIRED BEFORE A PERMIT CAN BE ISSUED.

All development and driveway construction must be completed in accordance with the Regulations of Harris County, Texas for Flood Plain Management (Adopted 8-28-97) and the Regulations of Harris County for the Construction of Driveways and/or Culverts on County Easements and Rights of Way. This application is valid only for property located in the Unincorporated Areas of Harris County, Texas.

The Applicant hereby acknowledges and agrees to be strictly bound to Commissioners' Court of Harris County in ensuring that all provisions, conditions and requirements attached to the issuance of the development permit(s) under the Regulations of Harris County, Texas for Flood Plain Management and driveway permit(s) under the Regulations of Harris County for the Construction of Driveways and/or Culverts on County Easements and Rights of Way will be faithfully and fully complied with.

The permit applicant understands and agrees that the County Engineer may make scheduled or unscheduled inspections of the property upon the issuance of the permit. The applicant acknowledges that the driveway construction must be inspected before the concrete is poured and after it is finished. The applicant is aware that pursuant to Chapter 352 of the Texas Local Government Code, the County Fire Marshal may, in the interest of safety and fire prevention, inspect certain structures for fire hazards. If the permit applicant is a corporation, partnership or other legal entity other than a natural person, then the undersigned acting as the authorized representative of said entity will be responsible for ensuring the entity's compliance with all provisions, conditions and requirements of the development and driveway permit.

I, LEE PARKER, the undersigned have carefully reviewed this application and my answers to all questions. To the best of my knowledge, the answers are all true and correct.

SIGNATURE of Applicant/Agent or Attorney _____ Date 1/31/11

Receiving	Planchecking	Records	Date Application Received
Applicant No. 103783	Planchecker	Dev # 1-0383734-7	Received JAN 31 2011 Harris County
Request No. 300834	Ap APPROVED By Darrell Hahn at 8:03 am, Feb 01, 2011	D/W#	
Property No. 326243	Date	D/W#	
Clerk & Date LFE 1/31/11	Vio No.	Receipt No.	

Code-647

Class "B"

HARRIS COUNTY

COMMERCIAL PERMIT APPLICATION

1. APPLICANT INFORMATION (Please print or type) PROJECT # 2009269 (CIVIL); _____ (FIRE)

Applicant Name PALMETTO TRANSOCEANIC, LLC

Applicant Mailing Address PO BOX 2311 City SPRING State TX Zip 77383-2311

E-Mail _____ Daytime Phone ~~713-539-8583~~ 281-355-3600 Fax 281-355-3696 Cell 713-539-8583

Property Owner Name PALMETTO TRANS OCEANIC Phone 281-355-3600

Property Owner's Mailing Address PO BOX 2311 City SPRING State TX Zip 77383-2311

2. LOCATION OF PROPERTY

Subdivision Springwoods Village Delta (1) Section _____ Block _____ Lot _____ Reserve _____

Street Address 23155 I-45 Site Zip Code 77373

Survey Name J. MOORE SURVEY/F. LIMSKY SURVEY Abstract Number 583 Acreage 243.3239

Property Tax Account Number [redacted]

3. CONSTRUCTION INFORMATION

- [ ] Professional or Mercantile Building
- [ ] Industrial Building
- [ ] Organized Sewer, Water System
- [ ] Public Works, Sewer & Water Plant Bldgs
- [ ] Sand Pit, Sanitary Landfill, Cut & Fill _____ CuYds
- [ ] Grading
- [ ] Multi-Family Bldg _____ Units _____
- [ ] Mobile Home Park, Units _____
- [x] Other Non-Residential Development Detention - East (Smallest)

Project Name _____ Describe the use of the proposed development _____

Estimated Cost of Construction $ 100,000.00 Square Footage: _____

4. SEWERAGE AND WATER SYSTEM

- [ ] Public Water & Sewer System
- [x] Utility District Name TBD
- [x] Private Water & Sewer System
- [ ] Existing Septic, Year Installed _____
- [ ] Water Well
- [ ] Proposed Septic

5. DRIVEWAY (Curb Cut ONLY): [ ] Existing Driveway, no new construction or add-on [ ] Private Road, Not County Maintained

[ ] New Installation: No. of approaches ____ [ ] Concrete [ ] Asphalt [ ] Gravel Width at Property Line _____ _____ _____

6. FIRE SAFETY [ ] Commercial Activity [ ] Accessible to the Public [ ] Hazardous Materials

ATTACH TWO SITE PLANS OR SURVEYS (to scale) SHOWING ALL PROPOSED IMPROVEMENTS INCLUDING DRIVEWAY(S) FOR PRELIMINARY REVIEW, MORE DETAILED DRAWINGS MAY BE REQUIRED BEFORE A PERMIT CAN BE ISSUED.

All development and driveway construction must be completed in accordance with the Regulations of Harris County, Texas for Flood Plain Management (Adopted 8-28-97) and the Regulations of Harris County for the Construction of Driveways and/or Culverts on County Easements and Rights of Way. This application is valid only for property located in the Unincorporated Areas of Harris County, Texas.

The Applicant hereby acknowledges and agrees to be strictly bound to Commissioners' Court of Harris County in ensuring that all provisions, conditions and requirements attached to the issuance of the development permit(s) under the Regulations of Harris County, Texas for Flood Plain Management and driveway permit(s) under the Regulations of Harris County for the Construction of Driveways and/or Culverts on County Easements and Rights of Way will be faithfully and fully complied with.

The permit applicant understands and agrees that the County Engineer may make scheduled or unscheduled inspections of the property upon the issuance of the permit. The applicant acknowledges that the driveway construction must be inspected before the concrete is poured and after it is finished. The applicant is aware that pursuant to Chapter 352 of the Texas Local Government Code, the County Fire Marshal may, in the interest of safety and fire prevention, inspect certain structures for fire hazards. If the permit applicant is a corporation, partnership or other legal entity other than a natural person, then the undersigned acting as the authorized representative of said entity will be responsible for ensuring the entity's compliance with all provisions, conditions and requirements of the development and driveway permit.

I, LEE PARKER, the undersigned have carefully reviewed this application and my answers to all questions. To the best of my knowledge, the answers are all true and correct.

SIGNATURE of Applicant/Agent or Attorney _____ Date 1/31/11

Receiving	Planchecking	Records	Date Application Received
Applicant No. 103783	Planchecker	Dev # 1-0383735-9	Received JAN 31 2011 Harris County
Request No. 300834	APPROVED By Darrell Hahn at 8:03 am, Feb 01, 2011	D/W#	
Property No. 326243	Date	D/W#	
Clerk & Date LFE 1/31/11	Vio No.	Receipt No.	

Code-647

Floodway

HARRIS COUNTY

COMMERCIAL PERMIT APPLICATION

1. APPLICANT INFORMATION (Please print or type) PROJECT # 2009269 (CIVIL); _____ (FIRE)

Applicant Name PALMETTO TRANSOCEANIC, LLC

Applicant Mailing Address PO BOX 2311 City SPRING State TX Zip 77383-2311

E-Mail _____ Daytime Phone ~~713-539-8583~~ 281-355-3600 Fax 281-355-3696 Cell 713-539-8583

Property Owner Name PALMETTO TRANS OCEANIC Phone 281-355-3600

Property Owner's Mailing Address PO BOX 2311 City SPRING State TX Zip 77383-2311

2. LOCATION OF PROPERTY

Subdivision Springwoods Village Delta (1) Section _____ Block _____ Lot _____ Reserve _____

Street Address 23155 I-45 Site Zip Code 77373

Survey Name J. MOORE SURVEY / P. LIMSKY SURVEY Abstract Number 583 / 217 Acreage 243.3239

Property Tax Account Number [redacted]

3. CONSTRUCTION INFORMATION

☐ Professional or Mercantile Building ☐ Public Works, Sewer & Water Plant Bldgs ☐ Multi-Family Bldg ____ Units ____

☐ Industrial Building ☐ Sand Pit, Sanitary Landfill, Cut & Fill ____ CuYds ☐ Mobile Home Park, Units ____

☐ Organized Sewer, Water System ☐ ing ☒ Other Non-Residential Development Det. Pond - East (Lwr)

Project Name _____ Describe the use of the proposed development _____

Estimated Cost of Construction $ 1,500,000.00 Square Footage: _____

4. SEWERAGE AND WATER SYSTEM

☐ Public Water & Sewer System ☒ Private Water & Sewer System ☐ Water Well

☒ Utility District Name TBD ☐ Existing Septic, Year Installed _____ ☐ Proposed Septic

5. DRIVEWAY (Curb Cut ONLY): ☐ Existing Driveway, no new construction or add-on ☐ Private Road, Not County Maintained

☐ New Installation: No. of approaches ____ ☐ Concrete ☐ Asphalt ☐ Gravel Width at Property Line _____

6. FIRE SAFETY ☐ Commercial Activity ☐ Accessible to the Public ☐ Hazardous Materials

ATTACH TWO SITE PLANS OR SURVEYS (to scale) SHOWING ALL PROPOSED IMPROVEMENTS INCLUDING DRIVEWAY(S) FOR PRELIMINARY REVIEW, MORE DETAILED DRAWINGS MAY BE REQUIRED BEFORE A PERMIT CAN BE ISSUED.

All development and driveway construction must be completed in accordance with the Regulations of Harris County, Texas for Flood Plain Management (Adopted 8-28-97) and the Regulations of Harris County for the Construction of Driveways and/or Culverts on County Easements and Rights of Way. This application is valid only for property located in the Unincorporated Areas of Harris County, Texas.

The Applicant hereby acknowledges and agrees to be strictly bound to Commissioners' Court of Harris County in ensuring that all provisions, conditions and requirements attached to the issuance of the development permit(s) under the Regulations of Harris County, Texas for Flood Plain Management and driveway permit(s) under the Regulations of Harris County for the Construction of Driveways and/or Culverts on County Easements and Rights of Way will be faithfully and fully complied with.

The permit applicant understands and agrees that the County Engineer may make scheduled or unscheduled inspections of the property upon the issuance of the permit. The applicant acknowledges that the driveway construction must be inspected before the concrete is poured and after it is finished. The applicant is aware that pursuant to Chapter 352 of the Texas Local Government Code, the County Fire Marshal may, in the interest of safety and fire prevention, inspect certain structures for fire hazards. If the permit applicant is a corporation, partnership or other legal entity other than a natural person, then the undersigned acting as the authorized representative of said entity will be responsible for ensuring the entity's compliance with all provisions, conditions and requirements of the development and driveway permit.

I, LEE PARKER, the undersigned have carefully reviewed this application and my answers to all questions. To the best of my knowledge, the answers are all true and correct.

SIGNATURE of Applicant/Agent or Attorney _____ Date 1/31/11

Receiving	Planchecking	Records	Date Application Received
Applicant No. 103783	Planchecker	Dev # 1-0383736-1	Received JAN 31 2011 Harris County
Request No. 300834	APPROVED By Darrell Hahn at 8:02 am, Feb 01, 2011	D/W#	
Property No. 326243	Date	D/W#	
Clerk & Date LFE 1/31/11	Vio No.	Receipt No.	

Code 647

Class 'B'
HARRIS COUNTY

COMMERCIAL PERMIT APPLICATION

1. APPLICANT INFORMATION (Please print or type) PROJECT # 2009269 (CIVIL); _____ (FIRE)

Applicant Name PALMETTO TRANSOCEANIC, LLC

Applicant Mailing Address PO BOX 2311 City SPRING State TX Zip 77383-2311

E-Mail _____ Daytime Phone ~~713-539-8583~~ 281-355-3600 Fax 281-355-3696 Cell 713-539-8583

Property Owner Name PALMETTO TRANS OCEANIC Phone 281-355-3600

Property Owner's Mailing Address PO BOX 2311 City SPRING State TX Zip 77383-2311

2. LOCATION OF PROPERTY

Subdivision Springwoods Village Delta (1) Section _____ Block _____ Lot _____ Reserve _____

Street Address 23155 I-45 Site Zip Code 77373

Survey Name J. MOORE SURVEY / P. LIMSKI SURVEY Abstract Number 583 / 5 Acreage 243.3239

Property Tax Account Number [redacted]

3. CONSTRUCTION INFORMATION

☐ Professional or Mercantile Building ☐ Public Works, Sewer & Water Plant Bldgs ☐ Multi-Family Bldg ____ Units ____

☐ Industrial Building ☐ Sand Pit, Sanitary Landfill, Cut & Fill ____ CuYds ☐ Mobile Home Park, Units ____

☐ Organized Sewer, Water System ☐ Other Non-Residential Development Det. Pond (West)

Project Name _____ Describe the use of the proposed development _____

Estimated Cost of Construction $ 1,000,000.00 Square Footage: _____

4. SEWERAGE AND WATER SYSTEM

☐ Public Water & Sewer System ☒ Private Water & Sewer System ☐ Water Well

☒ Utility District Name TBD ☐ Existing Septic, Year Installed _____ ☐ Proposed Septic

5. DRIVEWAY (Curb Cut ONLY): ☐ Existing Driveway, no new construction or add-on ☐ Private Road, Not County Maintained

☐ New Installation: No. of approaches ____ ☐ Concrete ☐ Asphalt ☐ Gravel Width at Property Line _____

6. FIRE SAFETY ☐ Commercial Activity ☐ Accessible to the Public ☐ Hazardous Materials

ATTACH TWO SITE PLANS OR SURVEYS (to scale) SHOWING ALL PROPOSED IMPROVEMENTS INCLUDING DRIVEWAY(S) FOR PRELIMINARY REVIEW, MORE DETAILED DRAWINGS MAY BE REQUIRED BEFORE A PERMIT CAN BE ISSUED.

All development and driveway construction must be completed in accordance with the Regulations of Harris County, Texas for Flood Plain Management (Adopted 8-28-97) and the Regulations of Harris County for the Construction of Driveways and/or Culverts on County Easements and Rights of Way. This application is valid only for property located in the Unincorporated Areas of Harris County, Texas.

The Applicant hereby acknowledges and agrees to be strictly bound to Commissioners' Court of Harris County in ensuring that all provisions, conditions and requirements attached to the issuance of the development permit(s) under the Regulations of Harris County, Texas for Flood Plain Management and driveway permit(s) under the Regulations of Harris County for the Construction of Driveways and/or Culverts on County Easements and Rights of Way will be faithfully and fully complied with.

The permit applicant understands and agrees that the County Engineer may make scheduled or unscheduled inspections of the property upon the issuance of the permit. The applicant acknowledges that the driveway construction must be inspected before the concrete is poured and after it is finished. The applicant is aware that pursuant to Chapter 352 of the Texas Local Government Code, the County Fire Marshal may, in the interest of safety and fire prevention, inspect certain structures for fire hazards. If the permit applicant is a corporation, partnership or other legal entity other than a natural person, then the undersigned acting as the authorized representative of said entity will be responsible for ensuring the entity's compliance with all provisions, conditions and requirements of the development and driveway permit.

I, LEE PARKER, the undersigned have carefully reviewed this application and my answers to all questions. To the best of my knowledge, the answers are all true and correct.

SIGNATURE of Applicant/Agent or Attorney _____ Date 1/31/11

Receiving	Planchecking	Records	Date Application Received
Applicant No. 103783	Planchecker	Dev # 1-0383737-4	Received JAN 31 2011 Harris County
Request No. 300834	APPROVED By Darrell Hahn at 8:02 am, Feb 01, 2011	D/W#	
Property No. 326243	Date	D/W#	
Clerk & Date LFE 1/31/11	Vio No.	Receipt No.	

Code 420

Class "B"

HARRIS COUNTY

COMMERCIAL PERMIT APPLICATION

1. APPLICANT INFORMATION (Please print or type) PROJECT # 2009269 (CIVIL); _____ (FIRE)

Applicant Name PALMETTO TRANSOLEANIC, LLC

Applicant Mailing Address PO BOX 2311 City SPRING State TX Zip 77383-2311

E-Mail _____ Daytime Phone ~~713-539-8583~~ Fax 281-355-3696 Cell 713-539-8583

Property Owner Name PALMETTO TRANS OLEANIC 281-355-3600 Phone 281-355-3600

Property Owner's Mailing Address PO BOX 2311 City SPRING State TX Zip 77383-2311

2. LOCATION OF PROPERTY

Subdivision Springwoods Village Delta (1) Section _____ Block _____ Lot _____ Reserve _____

Street Address 23155 I-45 Site Zip Code 77373

Survey Name J. MOORE SURVEY / P. LIMSKI SURVEY Abstract Number 583 / 310 Acreage 243.3239

Property Tax Account Number [redacted]

3. CONSTRUCTION INFORMATION

- [ ] Professional or Mercantile Building
- [ ] Industrial Building
- [x] Organized Sewer, Water System
- [ ] Public Works, Sewer & Water Plant Bldgs
- [ ] Sand Pit, Sanitary Landfill, Cut & Fill _____ CuYds
- [ ] Paving
- [ ] Other Non-Residential Development
- [ ] Multi-Family Bldg _____ Units _____
- [ ] Mobile Home Park, Units _____

Project Name _____ Describe the use of the proposed development Storm Sewer

Estimated Cost of Construction $ 16,700,000 _____ Square Footage: _____

4. SEWERAGE AND WATER SYSTEM

- [ ] Public Water & Sewer System
- [x] Utility District Name TBD
- [x] Private Water & Sewer System
- [ ] Existing Septic, Year Installed _____
- [ ] Water Well
- [ ] Proposed Septic

5. DRIVEWAY (Curb Cut ONLY): [ ] Existing Driveway, no new construction or add-on [ ] Private Road, Not County Maintained

[x] New Installation: No. of approaches 3 [x] Concrete [ ] Asphalt [ ] Gravel Width at Property Line 36' 36' 36'

6. FIRE SAFETY [ ] Commercial Activity [ ] Accessible to the Public [ ] Hazardous Materials

ATTACH TWO SITE PLANS OR SURVEYS (to scale) SHOWING ALL PROPOSED IMPROVEMENTS INCLUDING DRIVEWAY(S) FOR PRELIMINARY REVIEW, MORE DETAILED DRAWINGS MAY BE REQUIRED BEFORE A PERMIT CAN BE ISSUED.

All development and driveway construction must be completed in accordance with the Regulations of Harris County, Texas for Flood Plain Management (Adopted 8-28-97) and the Regulations of Harris County for the Construction of Driveways and/or Culverts on County Easements and Rights of Way. This application is valid only for property located in the Unincorporated Areas of Harris County, Texas.

The Applicant hereby acknowledges and agrees to be strictly bound to Commissioners' Court of Harris County in ensuring that all provisions, conditions and requirements attached to the issuance of the development permit(s) under the Regulations of Harris County, Texas for Flood Plain Management and driveway permit(s) under the Regulations of Harris County for the Construction of Driveways and/or Culverts on County Easements and Rights of Way will be faithfully and fully complied with.

The permit applicant understands and agrees that the County Engineer may make scheduled or unscheduled inspections of the property upon the issuance of the permit. The applicant acknowledges that the driveway construction must be inspected before the concrete is poured and after it is finished. The applicant is aware that pursuant to Chapter 352 of the Texas Local Government Code, the County Fire Marshal may, in the interest of safety and fire prevention, inspect certain structures for fire hazards. If the permit applicant is a corporation, partnership or other legal entity other than a natural person, then the undersigned acting as the authorized representative of said entity will be responsible for ensuring the entity's compliance with all provisions, conditions and requirements of the development and driveway permit.

I, LEE PARKER, the undersigned have carefully reviewed this application and my answers to all questions. To the best of my knowledge, the answers are all true and correct.

SIGNATURE of Applicant/Agent or Attorney _____ Date 1/31/11

Receiving	Planchecking	Records	Date Application Received
Applicant No. 103783	Approved APPROVED By Darrell Hahn at 8:02 am, Feb 01, 2011	Dev # 1-0383738-6	Received JAN 31 2011 Harris County
Request No. 300834	Approved By	D/W# 3-0245382-7	
Property No. 326243	Date 3-0245385-4	D/W# 3-0245383-9	
Clerk & Date LFE 1/31/11	Vio No.	Receipt No.	

Code-727

Class "B"

HARRIS COUNTY

COMMERCIAL PERMIT APPLICATION

1. APPLICANT INFORMATION (Please print or type) PROJECT # 2009269 (CIVIL); _____ (FIRE)

Applicant Name PALMETTO TRANSOCEANIC, LLC

Applicant Mailing Address PO BOX 2311 City SPRING State TX Zip 77383-2311

E-Mail _____ Daytime Phone ~~713-539-8583~~ 281-355-3600 Fax 281-385-3696 Cell 713-539-8583

Property Owner Name PALMETTO TRANS OCEANIC Phone 281-355-3600

Property Owner's Mailing Address PO BOX 2311 City SPRING State TX Zip 77383-2311

2. LOCATION OF PROPERTY

Subdivision Springwoods Village Delta (1) Section _____ Block _____ Lot _____ Reserve _____

Street Address 23155 I-45 Site Zip Code 77373

Survey Name J. MOORE SURVEY / F. LIMSKY SURVEY Abstract Number 583 / 517 Acreage 243.3239

Property Tax Account Number [redacted]

3. CONSTRUCTION INFORMATION

- [ ] Professional or Mercantile Building
- [ ] Industrial Building
- [ ] Organized Sewer, Water System
- [ ] Public Works, Sewer & Water Plant Bldgs
- [ ] Sand Pit, Sanitary Landfill, Cut & Fill _____ CuYds
- [X] ing
- [ ] Other Non-Residential Development
- [ ] Multi-Family Bldg _____ Units _____
- [ ] Mobile Home Park, Units _____

Project Name _____ Describe the use of the proposed development Private Roadway

Estimated Cost of Construction $ 3,000,000.00 Square Footage: _____

4. SEWERAGE AND WATER SYSTEM

- [ ] Public Water & Sewer System
- [X] Utility District Name TBD
- [X] Private Water & Sewer System
- [ ] Existing Septic, Year Installed _____
- [ ] Water Well
- [ ] Proposed Septic

5. DRIVEWAY (Curb Cut ONLY): [ ] Existing Driveway, no new construction or add-on [ ] Private Road, Not County Maintained

[X] New Installation: No. of approaches 3 [X] Concrete [ ] Asphalt [ ] Gravel Width at Property Line 36' 36' 36'

6. FIRE SAFETY [ ] Commercial Activity [ ] Accessible to the Public [ ] Hazardous Materials

ATTACH TWO SITE PLANS OR SURVEYS (to scale) SHOWING ALL PROPOSED IMPROVEMENTS INCLUDING DRIVEWAY(S) FOR PRELIMINARY REVIEW, MORE DETAILED DRAWINGS MAY BE REQUIRED BEFORE A PERMIT CAN BE ISSUED.

All development and driveway construction must be completed in accordance with the Regulations of Harris County, Texas for Flood Plain Management (Adopted 8-28-97) and the Regulations of Harris County for the Construction of Driveways and/or Culverts on County Easements and Rights of Way. This application is valid only for property located in the Unincorporated Areas of Harris County, Texas.

The Applicant hereby acknowledges and agrees to be strictly bound to Commissioners' Court of Harris County in ensuring that all provisions, conditions and requirements attached to the issuance of the development permit(s) under the Regulations of Harris County, Texas for Flood Plain Management and driveway permit(s) under the Regulations of Harris County for the Construction of Driveways and/or Culverts on County Easements and Rights of Way will be faithfully and fully complied with.

The permit applicant understands and agrees that the County Engineer may make scheduled or unscheduled inspections of the property upon the issuance of the permit. The applicant acknowledges that the driveway construction must be inspected before the concrete is poured and after it is finished. The applicant is aware that pursuant to Chapter 352 of the Texas Local Government Code, the County Fire Marshal may, in the interest of safety and fire prevention, inspect certain structures for fire hazards. If the permit applicant is a corporation, partnership or other legal entity other than a natural person, then the undersigned acting as the authorized representative of said entity will be responsible for ensuring the entity's compliance with all provisions, conditions and requirements of the development and driveway permit.

I, LEE PARKER, the undersigned have carefully reviewed this application and my answers to all questions. To the best of my knowledge, the answers are all true and correct.

SIGNATURE of Applicant/Agent or Attorney _____ Date 1/31/11

Receiving	Planchecking	Records	Date Application Received
Applicant No. 103783	Planchecker APPROVED By Darrell Hahn at 8:02 am, Feb 01, 2011	Dev # 1-0383739-8	Received JAN 31 2011 Harris County
Request No. 300834	Approved By	D/W# 3-0245386-6	
Property No. 326243	Date 3-0245388-1	D/W# 3-0245387-9	
Clerk & Date LFE 1/31/11	Vio No.	Receipt No.	

Code 541

Class "A"

HARRIS COUNTY

COMMERCIAL PERMIT APPLICATION

1. APPLICANT INFORMATION (Please print or type) PROJECT # 2009269 (CIVIL); _____ (FIRE)

Applicant Name PALMETTO TRANSOCEANIC, LLC

Applicant Mailing Address PO BOX 2311 City SPRING State TX Zip 77383-2311

E-Mail _____ Daytime Phone ~~713-539-8583~~ 281-355-3600 Fax 281-355-3696 Cell 713-539-8583

Property Owner Name PALMETTO TRANS OCEANIC Phone 281-355-3600

Property Owner's Mailing Address PO BOX 2311 City SPRING State TX Zip 77383-2311

2. LOCATION OF PROPERTY

Subdivision Springwoods Village Delta (1) Section _____ Block _____ Lot _____ Reserve _____

Street Address 23155 I-45 Site Zip Code 77373

Survey Name J. MOORE SURVEY / P. LIMSKY SURVEY Abstract Number 583 / 510 Acreage 243.3239

Property Tax Account Number [redacted]

3. CONSTRUCTION INFORMATION

☐ Professional or Mercantile Building ☐ Public Works, Sewer & Water Plant Bldgs ☐ Multi-Family Bldg _____ Units _____

☐ Industrial Building ☐ Sand Pit, Sanitary Landfill, Cut & Fill _____ CuYds ☐ Mobile ~~Home Park~~, Units _____

☐ Organized Sewer, Water System ☐ ing ☒ Other Non-Residential Development Job Trailer #2

Project Name _____ Describe the use of the proposed development _____

Estimated Cost of Construction $ 280,000.00 Square Footage: 5376 SF

4. SEWERAGE AND WATER SYSTEM

☐ Public Water & Sewer System ☒ Private Water & Sewer System ☐ Water Well

☒ Utility District Name TBD ☐ Existing Septic, Year Installed _____ ☐ Proposed Septic

5. DRIVEWAY (Curb Cut ONLY): ☐ Existing Driveway, no new construction or add-on ☐ Private Road, Not County Maintained

☐ New Installation: No. of approaches _____ ☐ Concrete ☐ Asphalt ☐ Gravel Width at Property Line _____ _____ _____

6. FIRE SAFETY ☐ Commercial Activity ☐ Accessible to the Public ☐ Hazardous Materials

ATTACH TWO SITE PLANS OR SURVEYS (to scale) SHOWING ALL PROPOSED IMPROVEMENTS INCLUDING DRIVEWAY(S) FOR PRELIMINARY REVIEW, MORE DETAILED DRAWINGS MAY BE REQUIRED BEFORE A PERMIT CAN BE ISSUED.

All development and driveway construction must be completed in accordance with the Regulations of Harris County, Texas for Flood Plain Management (Adopted 8-28-97) and the Regulations of Harris County for the Construction of Driveways and/or Culverts on County Easements and Rights of Way. This application is valid only for property located in the Unincorporated Areas of Harris County, Texas.

The Applicant hereby acknowledges and agrees to be strictly bound to Commissioners' Court of Harris County in ensuring that all provisions, conditions and requirements attached to the issuance of the development permit(s) under the Regulations of Harris County, Texas for Flood Plain Management and driveway permit(s) under the Regulations of Harris County for the Construction of Driveways and/or Culverts on County Easements and Rights of Way will be faithfully and fully complied with.

The permit applicant understands and agrees that the County Engineer may make scheduled or unscheduled inspections of the property upon the issuance of the permit. The applicant acknowledges that the driveway construction must be inspected before the concrete is poured and after it is finished. The applicant is aware that pursuant to Chapter 352 of the Texas Local Government Code, the County Fire Marshal may, in the interest of safety and fire prevention, inspect certain structures for fire hazards. If the permit applicant is a corporation, partnership or other legal entity other than a natural person, then the undersigned acting as the authorized representative of said entity will be responsible for ensuring the entity's compliance with all provisions, conditions and requirements of the development and driveway permit.

I, LEE PARKER, the undersigned have carefully reviewed this application and my answers to all questions. To the best of my knowledge, the answers are all true and correct.

SIGNATURE of Applicant/Agent or Attorney _____ Date 1/31/11

Receiving	Planchecking	Records	Date Application Received
Applicant No. 103783	Planchecker	Dev # 1-0383740-6	Received JAN 31 2011 Harris County
Request No. 300834	A APPROVED By Darrell Hahn at 8:03 am, Feb 01, 2011	D/W#	
Property No. 326243	Date	D/W#	
Clerk & Date LFE 1/31/11	Vio No.	Receipt No.	

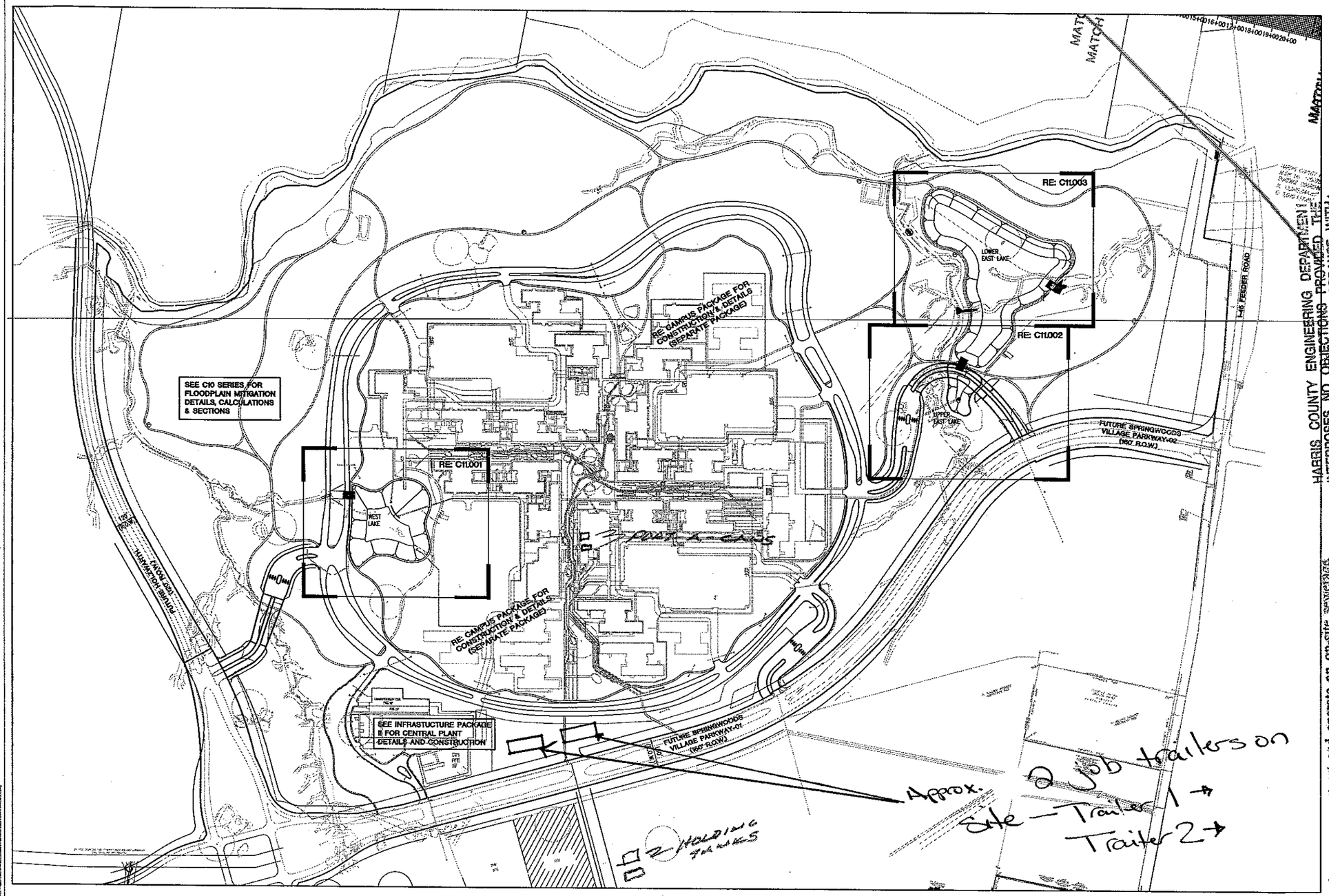

HARRIS COUNTY ENGINEERING DEPARTMENT
INTERPOSES NO OBJECTIONS PROVIDED THE
SYSTEM IS INSTALLED IN ACCORDANCE WITH
THESE PLANS. SYSTEM DESIGNER, INSTALLER
AND PROPERTY OWNER ARE RESPONSIBLE FOR
PROPER SYSTEM OPERATION.

1.31.2011
Date

Signature

This License to construct and operate an on-site sewerage facility requires that this Department INSPECT AND APPROVE the construction of the said facility PRIOR TO COVER UP and PRIOR TO PLACING IT INTO OPERATION. Failure to comply with these requirements constitutes a Class "C" Misdemeanor.
CALL 956-3035 TO SCHEDULE INSPECTION

PROJECT DELTA

Gensler
711 Louisiana Street
Suite 300
Houston TX 77002
Phone 713.844.0000

WALTER P MOORE

WALTER P. MOORE AND ASSOCIATES, INC.
1301 McKINNEY, SUITE 1100
HOUSTON, TEXAS 77010
PHONE: 713.630.7300 FAX: 713.630.7396

HONGKONG DALLAS TAMPA VALENCIA
ORLANDO KANSAS CITY MARTIN LOS ANGELES SAN YSIDRO

Rev #	Date	Description
	02/10/2010	Infrastructure Group #1 75% SD Issue
	02/22/2010	Infrastructure Group #1 100% SD Issue
	03/12/2010	Campus 75% SD Issue
	04/27/2010	Infrastructure 50% DD Issue
	06/15/2010	Infrastructure Group #1 75% DD Issue
	07/29/2010	Infrastructure 100% DD Issue
	08/25/2010	Infrastructure Submission For Harris County Approval

PROPRIETARY

Seal/Signature

Walter P. Moore and Associates, Inc.
TBPE Firm Registration No. 1856

STATE OF TEXAS
GREGORY M. STRUME
102250
LICENSED
PROFESSIONAL ENGINEER

Gregory M. Strume, P.E.
8/17/10

Project Name
PROJECT DELTA

Project Number
02.6964.000

CAD File Name

Description
OVERALL LAKE PLAN

Sheet Information

True North

0 50' 100' 200' 400'

ID	VOLUME	SHEET
SF1	V1	C11.000

©2010 Gensler

For County Use Only
Permit No. _____
Property No. _____

NOTICE OF DETENTION REQUIREMENTS

The below referenced property known as: Springwoods Village Delta Sec 1

Subdivision: _____

Section: _____ Lot: _____ Block _____

(OR)

Survey: F. Limsky Survey, J. Moore Survey Abstract: 512 & 583 respectively

Is encumbered by detention requirements as outlined in the Regulations of Harris County, Texas for the Approval and Acceptance of Infrastructure. The owner of the subject tract is responsible for the proper operation and maintenance of the detention facility in perpetuity. Failure to do such will lead to legal action.

The requirement may be revoked only by satisfying the County Engineer that alternative storm water management methods have been undertaken. At that time the County Engineer may revoke this requirement and place in the Real Property Records a Release of Detention Requirements document.

Owner Signature

1-31-11
Date

SWORN TO AND SUBSCRIBED BEFORE ME on this 31 day of January, 2011 by PTO, LLC
(Print Property Owner's Name)

SEAL

DONNA RENEE MARSHALL
Notary Public, State of Texas
My Commission Expires
June 17, 2014

Notary Public, State of Texas

My Commission Expires 6/17/2014

COUNTY CLERK RETURN TO:
Harris County Public Infrastructure Department
Architecture and Engineering Division – Permit Office
10555 Northwest Freeway, Ste. 120, Houston, TX 77092

FOR
REFERENCE
ONLY

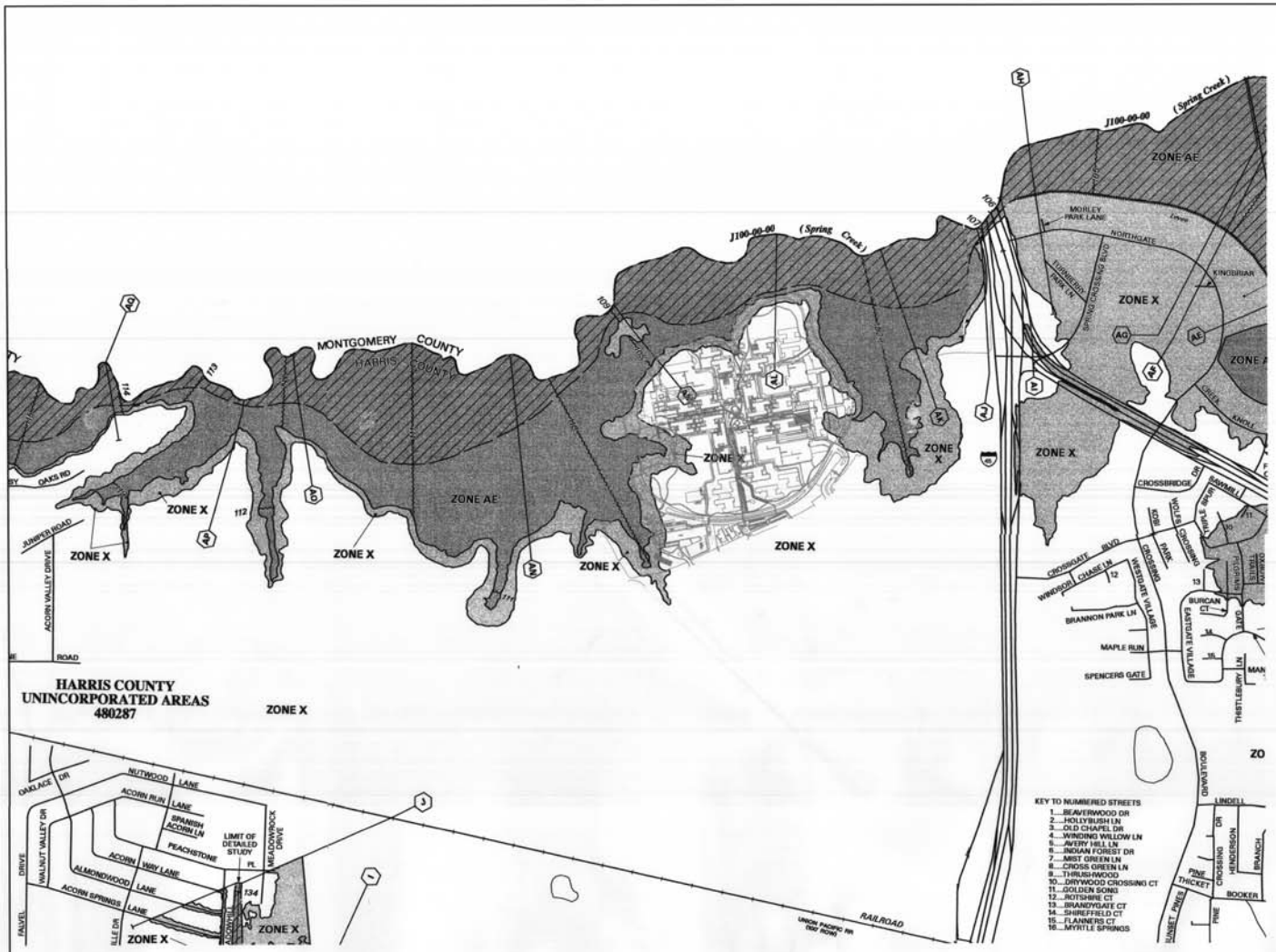

NFIP NATIONAL FLOOD INSURANCE PROGRAM

PANEL 0260L

FIRM
FLOOD INSURANCE RATE MAP
HARRIS COUNTY,
TEXAS
AND INCORPORATED AREAS

PANEL 260 OF 1150
(SEE MAP INDEX FOR FIRM PANEL LAYOUT)

CONTAINS:

COMMUNITY	NUMBER	PANEL	SUFFIX
HARRIS COUNTY, UNINCORPORATED AREAS	480287	0260	L
HEDWIG VILLAGE, CITY OF	480186	0260	L

Notice to User: The **Map Number** shown below should be used when placing map orders; the **Community Number** shown above should be used on insurance applications for the subject community.

MAP NUMBER
48201C0260L

MAP REVISED:
JUNE 18, 2007

Federal Emergency Management Agency

NFIP NATIONAL FLOOD INSURANCE PROGRAM

PANEL 0255L

FIRM
FLOOD INSURANCE RATE MAP
HARRIS COUNTY,
TEXAS
AND INCORPORATED AREAS

PANEL 255 OF 1150
(SEE MAP INDEX FOR FIRM PANEL LAYOUT)

CONTAINS:

COMMUNITY	NUMBER	PANEL	SUFFIX
HARRIS COUNTY, UNINCORPORATED AREAS	480287	0255	L

Notice to User: The **Map Number** shown below should be used when placing map orders; the **Community Number** shown above should be used on insurance applications for the subject community.

MAP NUMBER
48201C0255L

MAP REVISED:
JUNE 18, 2007

Federal Emergency Management Agency

This is an official copy of a portion of the above referenced flood map. It was extracted using F-MIT On-Line. This map does not reflect changes or amendments which may have been made subsequent to the date on the title block. For the latest product information about National Flood Insurance Program flood maps check the FEMA Flood Map Store at www.msc.fema.gov

PROJECT DELTA

Gensler
711 Louisiana Street
Suite 300
Houston TX 77002
Phone 713.844.0000

WALTER P MOORE

WALTER P. MOORE and ASSOCIATES, INC.
1301 McKINNEY, SUITE 1100
HOUSTON, TEXAS 77010
Voice: 713.630.7300 Fax: 713.630.7304

LOCATED DALLAS, TARRY STUDIO
DALLAS, CHICAGO, SCIT, SUPER, LOS ANGELES, LAS VEGAS

Rev #	Date	Description
	11/22/2010	Response to Harris County Comments
	01/13/2011	Response to Harris County Comments

PROPRIETARY

Seal/Signature

Walter P. Moore and Associates, Inc.
TBPE Firm Registration No. 1006

CHARLES M. PEARLAND
68424
REGISTERED
PROFESSIONAL ENGINEER
TEXAS

1-7-11

Project Name
PROJECT DELTA

Project Number
02.0064.000

CAD File Name

Description
FIRM MAP

Sheet Information

True North

0 125 250 500 1000

ID	VOLUME	SHEET
SF1	V1	C02.100

©2010 Gensler

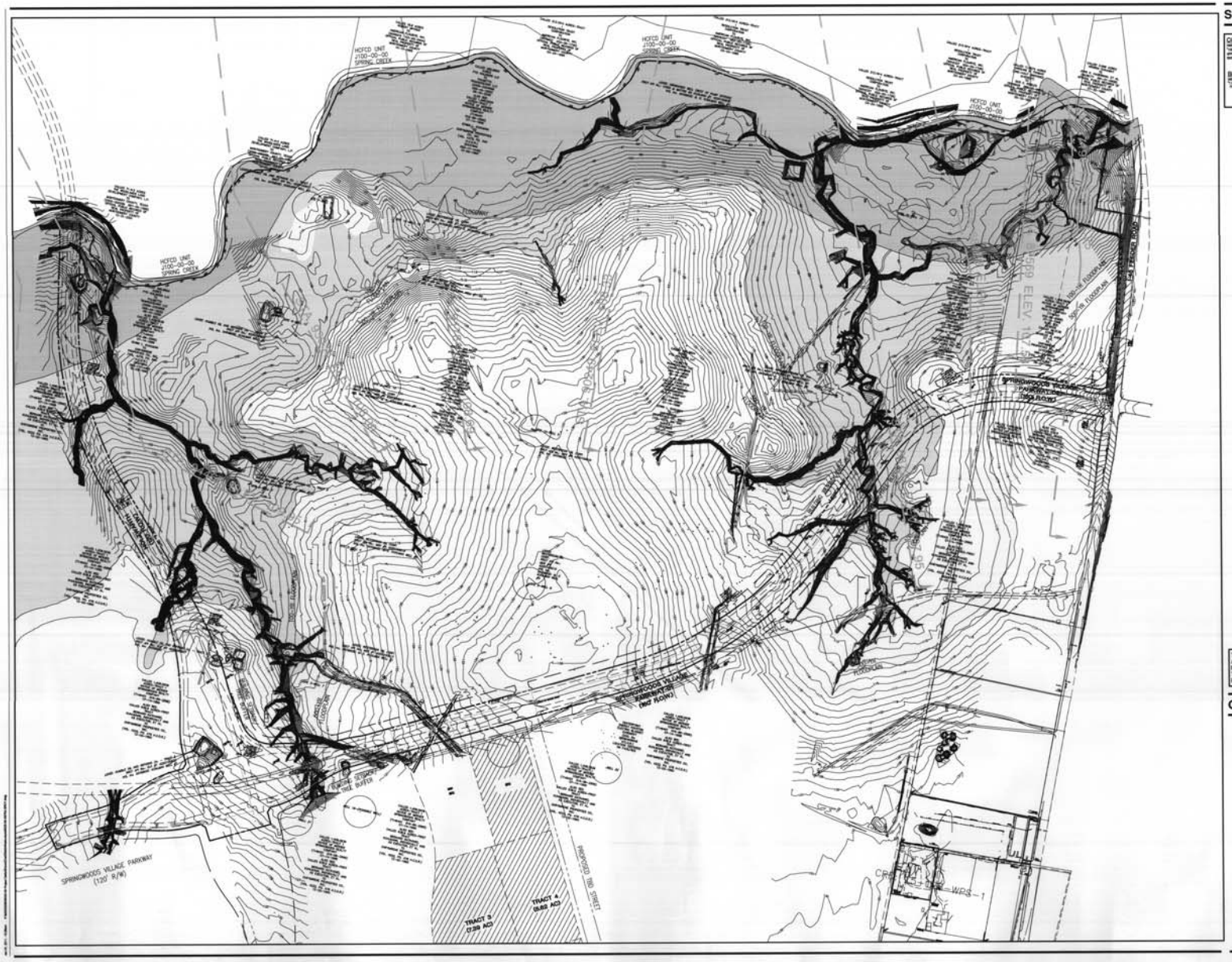

SHEET NOTES

CONTROL BENCHMARK

[illegible]

BENCHMARK

[illegible]

ELEVATION 123.30 (NAVD 88, 2001 ADJ.)
AS DESIGNATED BY CONTROL BENCHMARK
ELEVATION 125.18 FOR "CLEAR" BAR SHAFT

THIS SITE LIES WITHIN A SHADED ZONE "X" AND ZONE AE ON FIRM MAP NUMBER 48201C0205L AND MAP NUMBER 48201C0225L WITH BFE RANGING FROM 107.99 TO 110.88. WORK IS PROPOSED WITHIN THE 100-YEAR FLOOD PLAIN AND THE FLOODWAY.

GENERAL NOTES

PROJECT DELTA

Gensler

711 Louisiana Street
Suite 300
Houston TX 77002
Phone 713.844.0000

WALTER P MOORE

WALTER P. MOORE AND ASSOCIATES, INC.
1301 McKINNEY, SUITE 1100
HOUSTON, TEXAS 77010
PHONE: 713-630-1200 FAX: 713-630-7388

HOUSTON DALLAS TAMPA ATLANTA
ORLANDO AUSTIN CITY AUSTIN LOS ANGELES LAS VEGAS

Rev #	Date	Description
	02/10/2010	Infrastructure Group #1 75% SD Issue
	02/22/2010	Infrastructure Group #1 100% SD Issue
	04/27/2010	Infrastructure 50% DD Issue
	06/15/2010	Infrastructure 75% DD Issue
	07/26/2010	Infrastructure 100% DD Issue
	08/25/2010	Infrastructure Submission For Harris County Approval
	09/16/2010	Infrastructure Progress Update
	11/11/2010	Infrastructure Progress Update
	11/22/2010	Response to Harris County Comments
	01/13/2011	Infrastructure Progress Update
	01/13/2011	Response to Harris County Comments

PROPRIETARY

Seal/Signature

Project Name
PROJECT DELTA

Project Number
02.0864.000

CAD File Name

Description
SITE PLAN - OVERALL SURVEY

Sheet Information

True North

0 50' 100' 200' 400'

ID	VOLUME	SHEET
SF1	V1	C02.000

©2010 Gensler

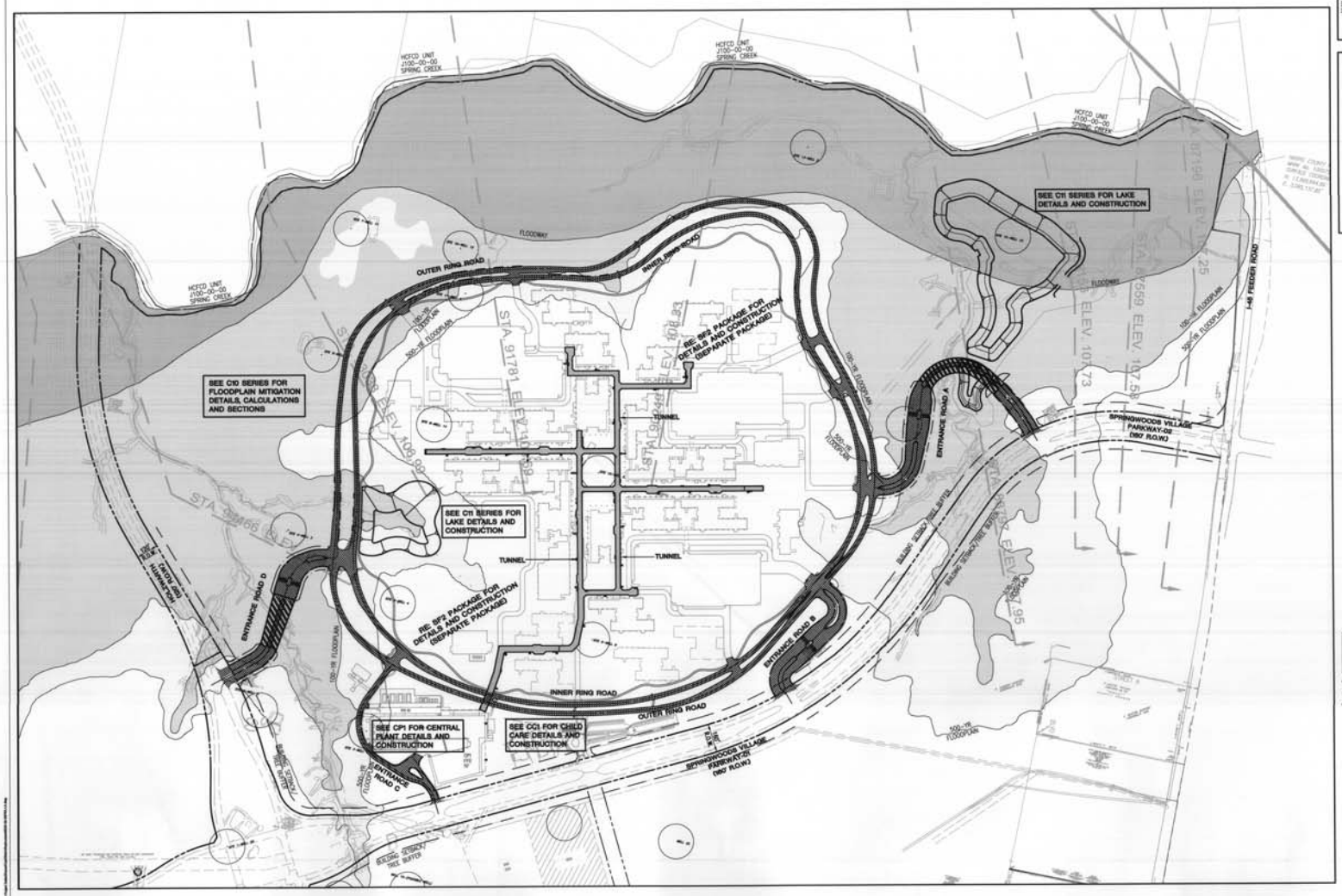

SHEET NOTES

CONTROL BENCHMARK

BENCHMARK

HATCH LEGEND

TUNNEL
SEE C08 SERIES FOR TUNNEL PLAN AND PROFILE
SEE ARCHITECTURAL AND STRUCTURAL PLANS FOR CONSTRUCTION DETAILS

ROAD
SEE C07 SERIES FOR DETAILS

BRIDGE
SEE C08 SERIES FOR BRIDGE DETAILS

THIS SITE LIES WITHIN A SHADED ZONE "X" AND ZONE AE, ON FIRM MAP NUMBER 48201C0260L, AND MAP NUMBER 48201C0255L, WITH BFE RANGING FROM 107.99 TO 110.80. WORK IS PROPOSED WITHIN THE 100-YEAR FLOOD PLAIN AND THE FLOODWAY.

GENERAL NOTES

PROJECT DELTA

Gensler
711 Louisiana Street
Suite 300
Houston TX 77002
Phone 713.844.2000

WALTER P MOORE

Rev #	Date	Description
	04/27/2010	Infrastructure 50% DD Issue
	07/29/2010	Infrastructure 100% DD Issue
	08/25/2010	Infrastructure Submission For Harris County Approval
	09/16/2010	Infrastructure Progress Update
	11/11/2010	Infrastructure Progress Update
	11/22/2010	Response to Harris County Comments
	01/13/2011	Infrastructure Progress Update
	01/13/2011	Response to Harris County Comments

PROPRIETARY

Seal/Signature

Project Name
PROJECT DELTA

Project Number
02.0064.000

CAD File Name

Description
SITE PLAN - OVERALL LAYOUT

Sheet Information

0 50' 100' 200' 400'

ID	VOLUME	SHEET
SF1	V1	C03.002

©2010 Gensler