HARRIS COUNTY PUBLIC INFRASTRUCTURE DEPARTMENT
ARCHITECTURE & ENGINEERING DIVISION - PERMIT GROUP

CORRECTED
DEC 06 2012
COPY

REGULATIONS OF HARRIS COUNTY, TEXAS FOR FLOOD PLAIN MANAGEMENT
DEVELOPMENT PERMIT

STATE OF TEXAS }{
COUNTY OF HARRIS }{

DATE: 07/05/11
PERMIT NUMBER: 1-0391264-6

This CLASS I permit is issued to PALMETTO TRANSOCEANIC, LLC. , pursuant to Regulations of Harris County, Texas, for Flood Plain Management. This permit is not transferable and is effective immediately. Construction must be started within 180 days of the date the permit is issued or the permit shall be null and void. Upon written request, two six-month extensions may be obtained. However, if construction has not started at the time a revision occurs in the Flood Insurance Rate Map (FIRM), this permit is void and a new permit must be obtained.

Harris County has not examined title to the site designated in this Permit nor has Harris County determined whether the construction described in this Permit is in violation of or contrary to any deed restrictions or covenants applicable to said site. The determination that the work to be performed is not in violation of any deed restrictions or applicable covenants shall be the responsibility of the permittee.

This permit authorizes the permittee to develop the following described property in Harris County, Texas in strict accordance with the plans for development filed with the Application for this Permit.

SECTION 01
SUBDIVISION - SPRINGWOODS VILLAGE DELTA
22777 SPRINGWOODS VILLAGE PKWY

WAREHOUSE/OFFICE COMBINATION STRUCTURE
BLDG# CD1

Work must not start until the permit issued herewith is posted at the building site. THE PERMITTEE MUST NOTIFY THE COUNTY ENGINEER WHENEVER WORK IS READY FOR THE INSPECTIONS REQUIRED BY THESE REGULATIONS. FAILURE TO COMPLY WITH THE REGULATIONS OF HARRIS COUNTY AND THE TERMS OF THIS PERMIT WILL RESULT IN LEGAL ACTION. Changes from the plans and specifications on file with the County Engineer must be approved by the County Engineer. The granting of this permit does not imply that the development can be insured by the Federal Flood Insurance Administration or that the development will be free from flooding.

The County Engineer may make scheduled or unscheduled inspections of the work in progress. Any work which does not comply with the plans and specifications filed with the application must be corrected or this Permit will be suspended or revoked.

The County Fire Marshal may make scheduled or unscheduled fire safety inspections of the completed structure. All fire hazards will be corrected at the request of the Fire Marshal.

THE JOBSITE COPY OF THIS PERMIT MUST BE POSTED IN A LOCATION PROTECTED FROM THE WEATHER AND SECURE FROM VANDALISM, AND KEPT POSTED UNTIL THE WORK IS COMPLETED. A SET OF APPROVED PLANS SUBMITTED WITH THE APPLICATION FOR THIS PERMIT MUST BE KEPT ON THE JOBSITE. NO REFUND IS ALLOWED ON EXPIRED, VOID OR CANCELED PERMITS, OR FOR INSPECTIONS THAT MAY HAVE BEEN CONDUCTED.

REPORT ALL VIOLATIONS TO COUNTY ENGINEER, AT (713) 956-3000.

http://hcpid.org/permits/

ADDENDUM ATTACHED

Permit Manager

COUNTY ENGINEER COPY

HARRIS COUNTY PUBLIC INFRASTRUCTURE DEPARTMENT
ARCHITECTURE & ENGINEERING DIVISION - PERMIT GROUP

CORRECTED
DEC 06 2012
COPY

REGULATIONS OF HARRIS COUNTY, TEXAS FOR FLOOD PLAIN MANAGEMENT
DEVELOPMENT PERMIT

STATE OF TEXAS }{
COUNTY OF HARRIS }{

DATE: 07/05/11
PERMIT NUMBER: 1-0391264-6

ADDENDUM

SECTION 01
SUBDIVISION - SPRINGWOODS VILLAGE DELTA
22777 SPRINGWOODS VILLAGE PKWY
WAREHOUSE/OFFICE COMBINATION STRUCTURE
BASE (100 YEAR) FLOOD ELEVATION AT LOT: 109.09
SITE ELEV: 115.00

REQUIRED INSPECTIONS

CFC LVL 9 50,000,001 AND UP

SPECIAL REQUIREMENTS

DEVELOPMENT TO BE COMPLETED IN ACCORDANCE W/ PLANS SUBMITTED
RIGHT OF WAY UTILITY WORK REQUIRES AUTHORIZATION NOTICE
PERMIT ISSUED WITH FLOOD CONTROL DIST. APPROVAL & CONDITIONS
THE COUNTY FIRE MARSHAL MAY MAKE SCHEDULED OR UNSCHEDULED
FIRE SAFETY INSPECTIONS OF THE COMPLETED STRUCTURE. ALL FIRE
HAZARDS WILL BE CORRECTED AT THE REQUEST OF THE FIRE MARSHAL
FOR INSP,SUBMIT "REQUEST FOR FINAL INSP FORM"FROM F/C WEBSIT
INSPECTION MUST BE REQUESTED BY ARCHITECT OR ENGINEER
PERMANENT STORM WATER QUALITY FEATURES REQUIRED

Permit Manager

COUNTY ENGINEER COPY

SEE CRM FOR PLANS

HARRIS COUNTY

COMMERCIAL PERMIT APPLICATION

1. APPLICANT INFORMATION (Please print or type) PROJECT # 2009269 (CIVIL, 2011056 (FIRE)

Applicant Name Palmetto Transoceanic, LLC

Applicant Mailing Address P.O. Box 2311 City Spring State TX Zip 77383-2311

E-Mail _____ Daytime Phone 281-355-3600 Fax 281-355-3696 Cell _____

Property Owner Name Palmetto Transoceanic, LLC Phone 281-355-3600

Property Owner's Mailing Address P.O. Box 2311 City Spring State TX Zip 77383-2311

2. LOCATION OF PROPERTY

Subdivision Springwoods Village Delta Section I Block _____ Lot _____ Reserve _____

Street Address 23155 I-45 Site Zip Code 77383

Survey Name J. Moore Survey / F. Limsky Survey Abstract Number 583 / 512 Acreage _____

Property Tax Account Number [redacted]

3. CONSTRUCTION INFORMATION

☐ Addition / Repair / Remodel ☐ Modular Trailer ☐ Cell Tower

☑ Other Central Plant ☐ Phase II Development (Fill, Detention, Paving, Utilities) ☐ Phase II Subdivision (Fill, Detention, Paving, Utilities)

Describe Proposed Development Project Delta Central Plan central plant bldg

Estimated Cost of Construction $ 76,000,000.00 Square Footage: 207,700 SF 212,735 PER FIRE CODE SHT.

4. SEWERAGE AND WATER SYSTEM

☑ Public Water & Sewer System ☐ Private Water & Sewer System ☐ Water Well

☑ Utility District Name TBD ☐ Existing Septic, Year Installed _____ ☐ Proposed Septic

5. DRIVEWAY (Curb Cut ONLY) ☑ Existing Driveway, no new construction or add-on ☐ Private Road, Not County Maintained

☐ New Installation: No. of approaches _____ ☐ Concrete ☐ Asphalt ☐ Gravel Width at Property Line _____ _____ _____

ATTACH TWO SITE PLANS OR SURVEYS (to scale) SHOWING ALL PROPOSED IMPROVEMENTS INCLUDING DRIVEWAY(S) FOR PRELIMINARY REVIEW, MORE DETAILED DRAWINGS MAY BE REQUIRED BEFORE A PERMIT CAN BE ISSUED.

All development and driveway construction must be completed in accordance with the Regulations of Harris County, Texas for Flood Plain Management (Adopted 8-28-97) and the Regulations of Harris County for the Construction of Driveways and/or Culverts on County Easements and Rights of Way. This application is valid only for property located in the Unincorporated Areas of Harris County, Texas.

The Applicant hereby acknowledges and agrees to be strictly bound to Commissioners' Court of Harris County in ensuring that all provisions, conditions and requirements attached to the issuance of the development permit(s) under the Regulations of Harris County, Texas for Flood Plain Management and driveway permit(s) under the Regulations of Harris County for the Construction of Driveways and/or Culverts on County Easements and Rights of Way will be faithfully and fully complied with.

The permit applicant understands and agrees that the County Engineer may make scheduled or unscheduled inspections of the property upon the issuance of the permit. The applicant acknowledges that the driveway construction must be inspected before the concrete is poured and after it is finished. The applicant is aware that pursuant to Chapter 352 of the Texas Local Government Code, the County Fire Marshal may, in the interest of safety and fire prevention, inspect certain structures for fire hazards. If the permit applicant is a corporation, partnership or other legal entity other than a natural person, then the undersigned acting as the authorized representative of said entity will be responsible for ensuring the entity's compliance with all provisions, conditions and requirements of the development and driveway permit.

I, BRAD A. CRENSHAW, the undersigned have carefully reviewed this application and my answers to all questions. To the best of my knowledge, the answers are all true and correct.

SIGNATURE of Applicant/Agent or Attorney Brad Crenshaw Date 6/22/11

Receiving	Plan Checking	Records	Date Application Received
Applicant No. 105950	APPROVED By acardenas at 3:35 pm, Jun 27, 2011	Dev # 1-0391264-6	RECEIVED JUN 24 2011 HARRIS COUNTY
Request No. 306316	Approved By	D/W#	
Property No. 339368	Date	D/W#	
Clerk & Date 6/24/11 GR	Vio No.	Receipt No.	

CODE 394 CLASS I IN X-SHADED ZONE LAG IS HIGHER THAN BFE

CFCh 9

CHANGE OF ADDRESS

Name Palmetto Transoceanic, LLC			A# 169950 P# 3427773
Mailing Address 23155 I 45 north freeway			Mail ☐
City Spring	State TX	Zip 77389	REPRINT ☐
Hm Phone	Wk Phone 281 355 3600		Clerk & Date QO 12/6/12
Fax	Pager		Fees Due $3

PROPERTY INFORMATION

Subdivision or Survey Name	UNRESTRICTED RESERVE "A" BLOCK 1 SPRINGWOODS VILLAGE DELTA SEC 1 (FILM CODE NO. 644287 H.C.M.R.) F. LIMSKY SURVEY, ABSTRACT 512 & J. MOORE SURVEY, ABSTRACT 583 HARRIS COUNTY, TEXAS	
Section or Abstract	Block	Lot or Tract

Incorrect Property Address: 23155 I 45 (North Freeway) 77389

Correct Property Address: (Obtain from Power Company) 22777 Springwoods Village Parkway

PERMITTEE'S ACKNOWLEDGEMENT OF DISCLAIMER REGARDING CHANGE OF ADDRESS

I, JOE MCCLELLAN, the undersigned hereby acknowledges that Harris County have my permission to correct the address on certain property in Harris County, Texas.

Signature: Joe McClellan

Print: JOE MCCLELLAN Date: 12-6-12

REQUEST FOR SERVICES

List all permits to be changed:

1-0391264-6 R-3063116	

Note: If making an inquiry or requesting a service by mail, please include any applicable fees with your submittal. Personal checks are accepted. Cost for address correction: $3.00 per permit.

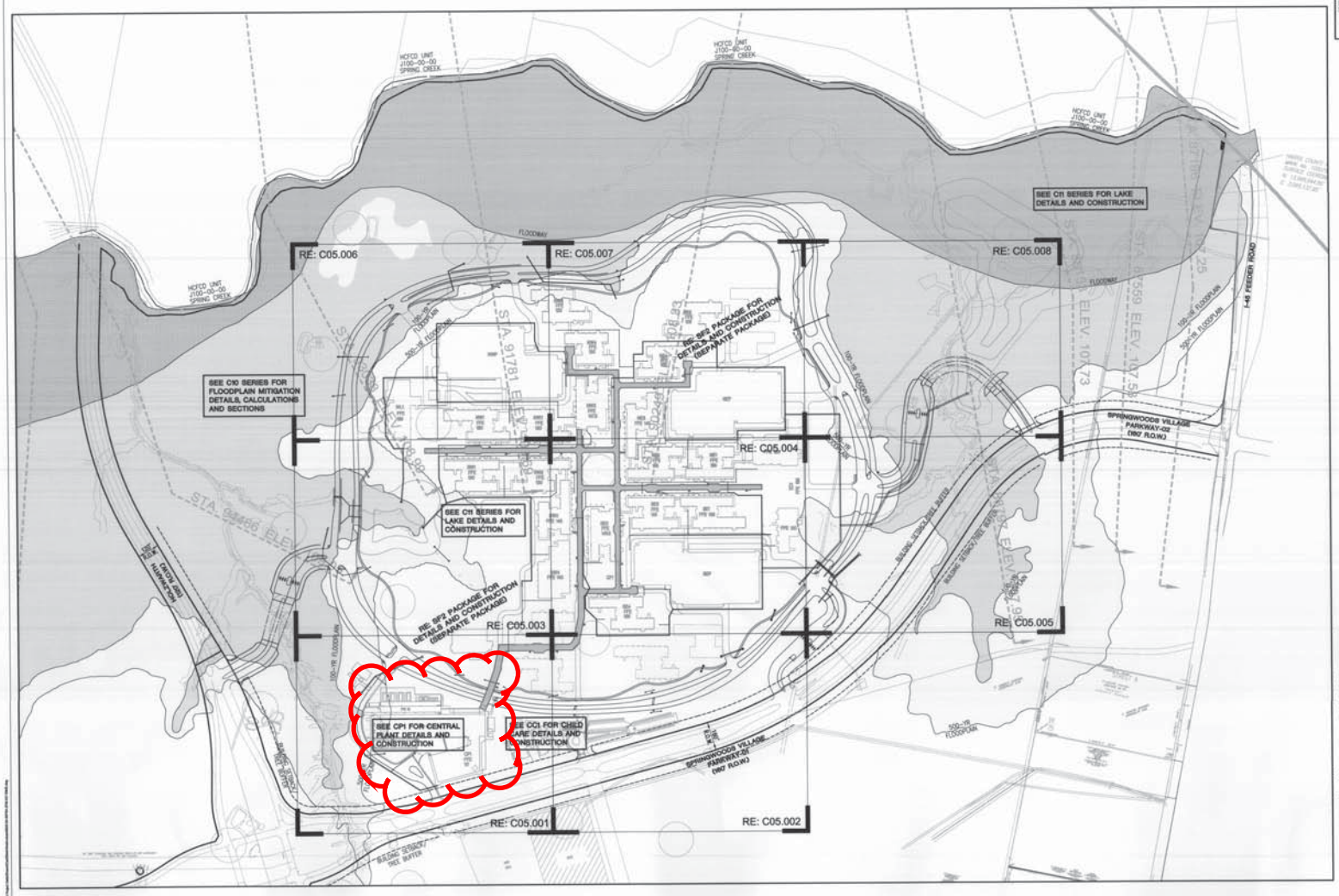

SHEET NOTES

CONTROL BENCHMARK

BENCHMARK

THIS SITE LIES WITHIN A SHADED ZONE "X" AND ZONE AE ON FIRM MAP NUMBER 48201C0255L AND MAP NUMBER 48201C0235L WITH BFE RANGING FROM 107.99 TO 110.80. WORK IS PROPOSED WITHIN THE 100-YEAR FLOOD PLAIN AND THE FLOODWAY.

GENERAL NOTES

1. CONTRACTOR SHALL ADJUST ALL UTILITY STRUCTURES & APPURTENANCES PER REQUIREMENTS WITHIN THE GENERAL NOTES & SPECIFICATION AT NO COST TO OWNER. CONTRACTOR SHALL ADJUST ALL UTILITY STRUCTURES INCLUDING BUT NOT LIMITED TO PROPOSED MANHOLE RIMS, INLET STRUCTURES, GRATES, VAULT COVERS AND VALVE BOXES TO MATCH PROPOSED GRADES AT NO COST TO THE OWNER.
2. RE: CONTRACTOR TO REFER TO MEP PLANS FOR ALL SEWER CONNECTIONS.
3. RE: SF2 PACKAGE FOR ALL CENTRAL PLANT STORM SEWER CONNECTIONS.

PROJECT DELTA

Gensler
711 Louisiana Street
Suite 300
Houston TX 77002
Phone 713.844.0000

WALTER P MOORE

Rev #	Date	Description
	04/27/2010	Infrastructure 50% DD Issue
	06/15/2010	Infrastructure Group #1 75% DD Issue
	07/29/2010	Infrastructure 100% DD Issue
	08/25/2010	Infrastructure Submission For Harris County Approval
	09/16/2010	Infrastructure Progress Update
	11/11/2010	Infrastructure Progress Update
	11/22/2010	Response to Harris County Comments
	01/13/2011	Infrastructure Progress Update
	01/13/2011	Response to Harris County Comments

PROPRIETARY

Seal/Signature

Project Name
PROJECT DELTA

Project Number
02.6864.000

CAD File Name

Description
SITE UTILITY PLAN - OVERALL STORM SEWER PLAN

Sheet Information

True North

0 50' 100' 200' 400'

ID	VOLUME	SHEET
SF1	V1	C05.000

©2010 Gensler

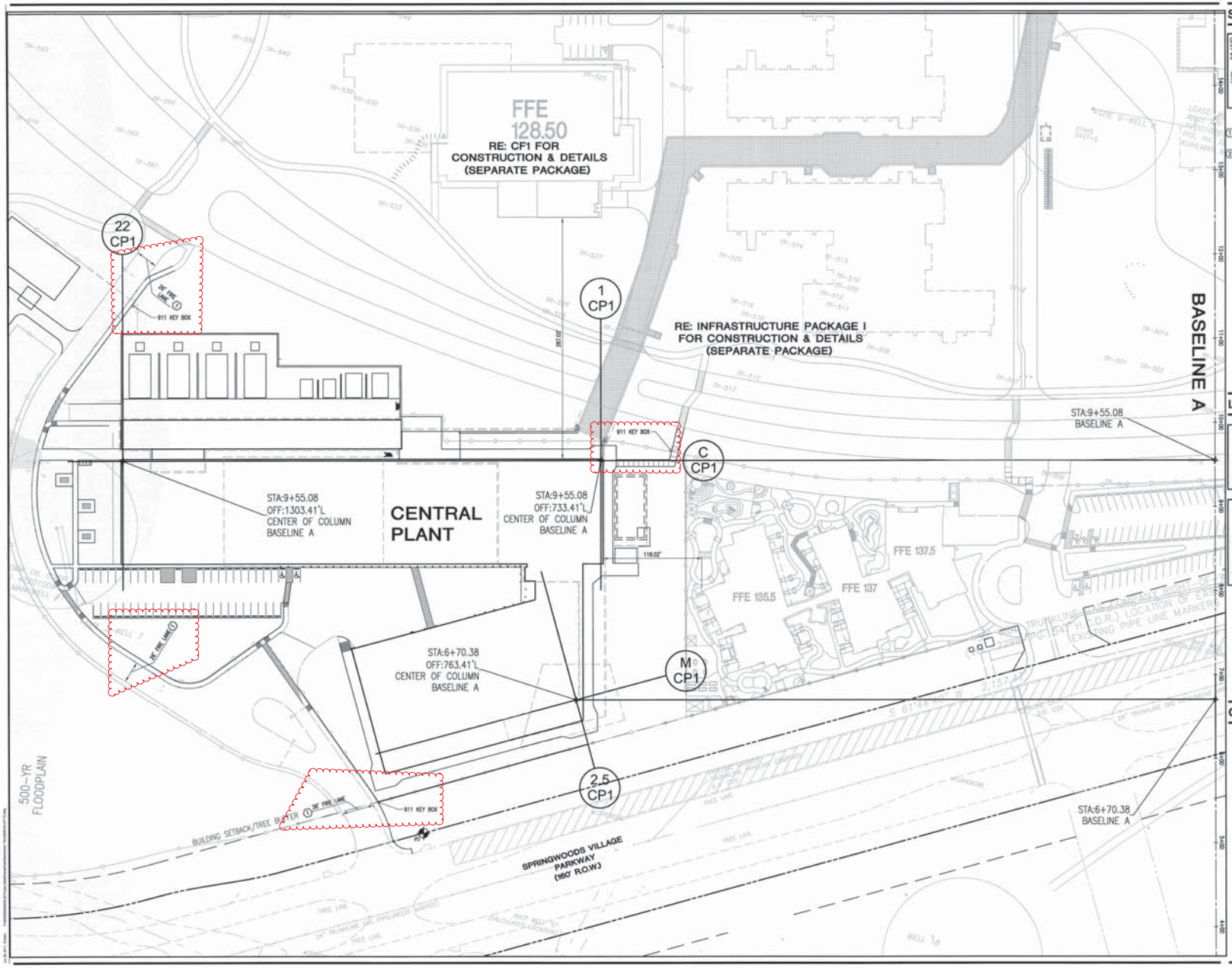

SHEET NOTES

CONTROL BENCHMARK

BENCHMARK

1. RE: SF2 PACKAGE FOR FIRE ACCESS & FIRE LANE CONSTRUCTION AND DETAILS.
2. RE: SF1 PACKAGE FOR PROJECT MONUMENT CONTROL INFORMATION

LEGEND

LEGEND

Floodway

100-Year Floodplain ELEV. 110'

500-Year Floodplain ELEV. 115'

HATCH LEGEND

TUNNEL
SEE C06 SERIES
FOR TUNNEL PLAN
AND PROFILE
SEE ARCHITECTURAL AND
STRUCTURAL PLANS FOR
CONSTRUCTION DETAILS

GENERAL NOTES

PROJECT DELTA

Gensler
711 Louisiana Street
Suite 300
Houston TX 77002
Phone 713.844.0000

WALTER P MOORE

Rev #	Date	Description
	01/13/2011	Central Plant 50% CD Issue
	02/08/2011	Central Plant Harris County Approval
	03/03/2011	Central Plant Progress Update
	03/22/2011	Bulletin#9 - Issue for Construction
	06/08/2011	Response to Harris County Comments

PROPRIETARY

Seal/Signature

Project Name
PROJECT DELTA

Project Number
02.6904.000

CAD File Name

Description
CENTRAL PLANT - CONTROL PLAN

Sheet Information

True North

0 10' 20' 40' 80'

ID	VOLUME	SHEET
CP1	V1	C03.002

©2010 Gensler

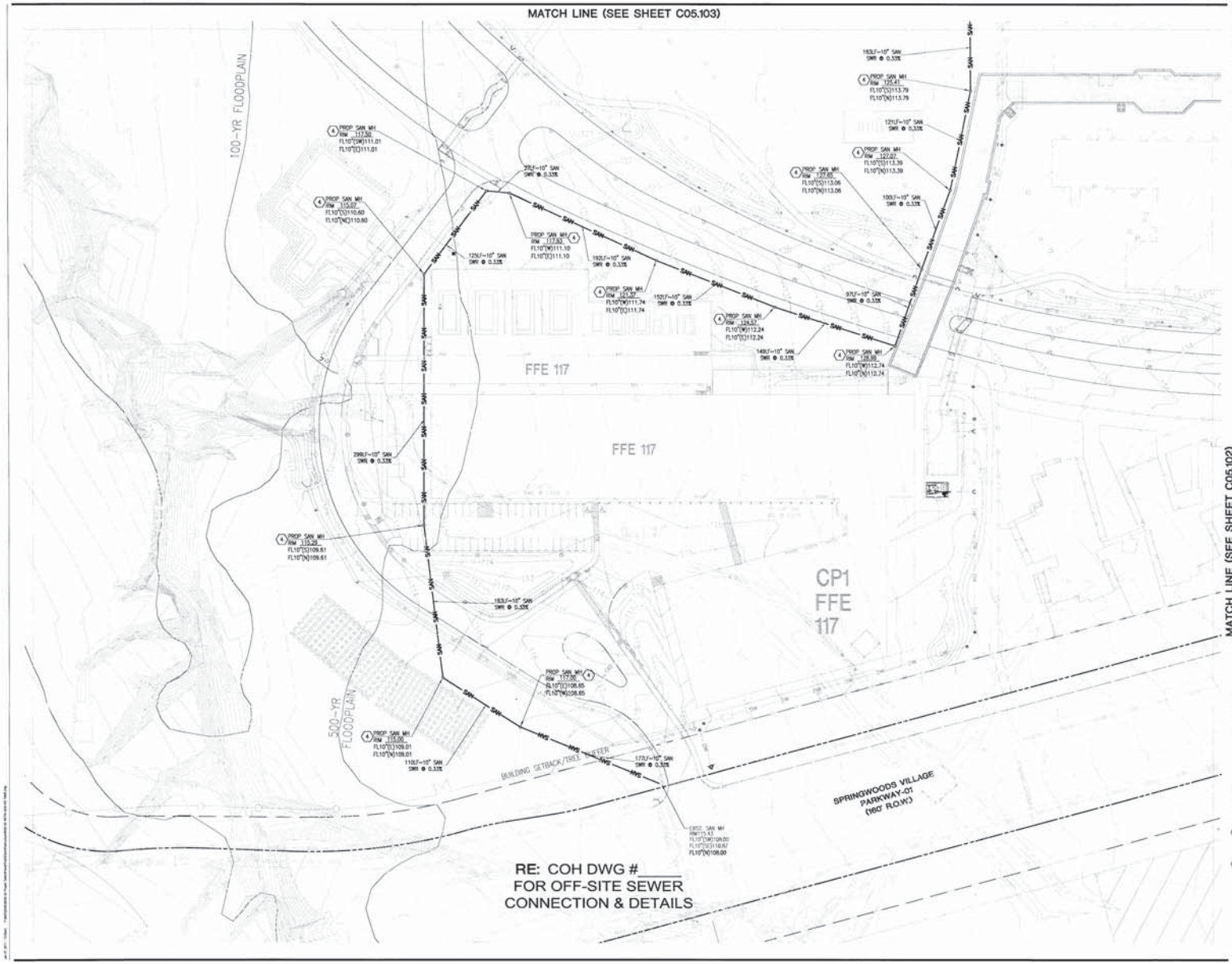

SHEET NOTES

CONTROL BENCHMARK

BENCHMARK

CONSTRUCTION NOTES:

1. ALL UTILITIES HAVE BEEN COORDINATED WITH LANDSCAPE. ANY DEVIATION FROM THE INFORMATION SHOWN IN THE SHEETS MUST BE APPROVED BY ENGINEER & LANDSCAPE ARCHITECT PRIOR TO CONSTRUCTION.

THIS SITE LIES WITHIN A SHADED ZONE "X" AND ZONE AE ON FIRM MAP NUMBER 48201C0260L AND MAP NUMBER 48201C0250L WITH SFE RANGING FROM 107.99 TO 110.80. WORK IS PROPOSED WITHIN THE 100-YEAR FLOOD PLAIN AND THE FLOODWAY.

GENERAL NOTES

1. CONTRACTOR SHALL ADJUST ALL UTILITY STRUCTURES & APPURTENANCES PER REQUIREMENTS WITHIN THE GENERAL NOTES & SPECIFICATION AT NO COST TO OWNER. CONTRACTOR SHALL ADJUST ALL UTILITY STRUCTURES INCLUDING BUT NOT LIMITED TO PROPOSED MANHOLE RIMS, INLET STRUCTURES, GRATES, VAULT COVERS AND VALVE BOXES TO MATCH PROPOSED GRADES AT NO COST TO THE OWNER.
2. RE: CONTRACTOR TO REFER TO MEP PLANS FOR ALL SANITARY SEWER CONNECTIONS.
3. RE: CP1 PACKAGE FOR ALL CENTRAL PLANT SANITARY SEWER CONNECTIONS.

4 3" 1"=14.300'

5 1" 1"=14.300'

PROJECT DELTA

Gensler
711 Louisiana Street
Suite 300
Houston TX 77002
Phone 713.844.0000

WALTER P MOORE

Rev #	Date	Description
	04/27/2010	Infrastructure 50% DD Issue
	06/15/2010	Infrastructure Group #1 75% DD Issue
	07/29/2010	Infrastructure 100% DD Issue
	08/25/2010	Infrastructure Submission For Harris County Approval
	09/16/2010	Infrastructure Progress Update
	11/11/2010	Infrastructure Progress Update
	11/22/2010	Response to Harris County Comments
	01/13/2011	Infrastructure Progress Update
	01/13/2011	Response to Harris County Comments

PROPRIETARY

Seal/Signature

Walter P. Moore and Associates, Inc.
TBPE Firm Registration No. 1848

1-7-11

Project Name
PROJECT DELTA

Project Number
02.0964.00

CAD File Name

Description
SITE UTILITY PLAN - SANITARY SEWER

Sheet Information

True North

0 10 20 40 80

ID	VOLUME	SHEET
SF1	V1	C05.101

©2010 Gensler

HARRIS COUNTY ENGINEER'S OFFICE - PERMIT DIVISION ENP43
=N PERMITS/REQUESTS FOR A PROPERTY LIST PAGE: 01

PROPERTY#: 339368_ TAX ACCOUNT#: [redacted]
23155 I 45 (NORTH FREEWAY) ZIP: 77373
SUBID: 7047 SECT: 01
SPRINGWOODS VILLAGE DELTA
PROPERTY OWNER: GILBANE BUILDING COMPANY HOME:
BUS.: (832) 563-2506

LN#	REQUEST#	CONST	SEQ	AMD	REGS/PERMIT	ISSUED	STR#	VIO#	RECEIPT#
01	285447	625		1	1-0363185-5	12/04/09			0222646-5
02	285447	693		1	1-0363184-3	12/04/09			0222646-5
03	294805	320		1	1-0376908-8	08/11/10			0232458-7
04	297353	693		1	1-0379333-6	10/12/10			0234610-4
05	298348	620		1	1-0380454-1	11/09/10			0235665-0
06	298348	625		1	1-0380455-3	11/09/10			0235665-0
07	298348	720		1	1-0380456-5	11/09/10			0235665-0

PF1-ADDR INQ PF2-INSP RQST UPD PF3-REQ UPD PF4-VIOL UPD PF5-PERMIT INQ
GP001 - PRESS THE ENTER KEY FOR THE NEXT PAGE, OR
GP003 - ENTER A LN # OVER THE =N IF NEEDED, AND PRESS THE DESIRED PF KEY.

HARRIS COUNTY ENGINEER'S OFFICE - PERMIT DIVISION ENP43
=N PERMITS/REQUESTS FOR A PROPERTY LIST PAGE: 02

PROPERTY#: 339368_ TAX ACCOUNT#: [redacted]
23155 I 45 (NORTH FREEWAY) ZIP: 77373
SUBID: 7047 SECT: 01
SPRINGWOODS VILLAGE DELTA
PROPERTY OWNER: GILBANE BUILDING COMPANY HOME:
BUS.: (832) 563-2506

LN#	REQUEST#	CONST	SEQ	AMD	REGS/PERMIT	ISSUED	STR#	VIO#	RECEIPT#
01	300280								
02	300822	8CO	1		8-0001873-8	02/01/11			0238413-3
03	300833	HTC	1		2-0021522-9	02/01/11			0238413-3
04	300834	541	1		1-0383730-7	02/01/11			0238413-3
05	300834	541	2		1-0383740-6	02/01/11			0238413-3
06	300834	600	1		1-0383731-0	02/01/11			0238413-3
07	300834	600	2		1-0383732-2	02/01/11			0238413-3

PF1-ADDR INQ PF2-INSP RQST UPD PF3-REQ UPD PF4-VIOL UPD PF5-PERMIT INQ
GP001 - PRESS THE ENTER KEY FOR THE NEXT PAGE, OR
GP003 - ENTER A LN # OVER THE =N IF NEEDED, AND PRESS THE DESIRED PF KEY.

HARRIS COUNTY ENGINEER'S OFFICE - PERMIT DIVISION ENP43
=N PERMITS/REQUESTS FOR A PROPERTY LIST PAGE: 03

PROPERTY#: 339368_ TAX ACCOUNT#: [redacted]
23155 I 45 (NORTH FREEWAY) ZIP: 77373
SUBID: 7047 SECT: 01
SPRINGWOODS VILLAGE DELTA
PROPERTY OWNER: GILBANE BUILDING COMPANY HOME:
BUS.: (832) 563-2506

LN#	REQUEST#	CONST	SEQ	AMD	REGS/PERMIT	ISSUED	STR#	VIO#	RECEIPT#
01	300834	620	1		1-0383733-4	02/01/11			0238413-3
02	300834	647	1		1-0383735-9	02/01/11			0238413-3
03	300834	647	2		1-0383736-1	02/01/11			0238413-3
04	300834	647	3		1-0383737-4	02/01/11			0238413-3
05	300834	693	1		1-0383734-7	02/01/11			0238413-3
06	300834	720	1		1-0383738-6	02/01/11			0238413-3
07	300834	727	1		1-0383739-8	02/01/11			0238413-3

PF1-ADDR INQ PF2-INSP RQST UPD PF3-REQ UPD PF4-VIOL UPD PF5-PERMIT INQ
GP001 - PRESS THE ENTER KEY FOR THE NEXT PAGE, OR
GP003 - ENTER A LN # OVER THE =N IF NEEDED, AND PRESS THE DESIRED PF KEY.

HARRIS COUNTY ENGINEER'S OFFICE - PERMIT DIVISION ENP43
=N PERMITS/REQUESTS FOR A PROPERTY LIST PAGE: 04

PROPERTY#: 339368_ TAX ACCOUNT#: [redacted]
23155 I 45 (NORTH FREEWAY) ZIP: 77373
SUBID: 7047 SECT: 01
SPRINGWOODS VILLAGE DELTA
PROPERTY OWNER: GILBANE BUILDING COMPANY HOME:
BUS.: (832) 563-2506

LN#	REQUEST#	CONST	SEQ	AMD	REGS/PERMIT	ISSUED	STR#	VIO#	RECEIPT#
01	300834	184	1		3-0245384-2	02/01/11			0238413-3
02	300834	184	2		3-0245382-7	02/01/11			0238413-3
03	300834	184	3		3-0245383-9	02/01/11			0238413-3
04	300834	184	4		3-0245385-4	02/01/11			0238413-3
05	300834	184	5		3-0245386-6	02/01/11			0238413-3
06	300834	184	6		3-0245387-9	02/01/11			0238413-3
07	300834	184	7		3-0245388-1	02/01/11			0238413-3

PF1-ADDR INQ PF2-INSP RQST UPD PF3-REQ UPD PF4-VIOL UPD PF5-PERMIT INQ
GP001 - PRESS THE ENTER KEY FOR THE NEXT PAGE, OR
GP003 - ENTER A LN # OVER THE =N IF NEEDED, AND PRESS THE DESIRED PF KEY.

HARRIS COUNTY ENGINEER'S OFFICE - PERMIT DIVISION ENP43
=N PERMITS/REQUESTS FOR A PROPERTY LIST PAGE: 05

PROPERTY#: 339368_ TAX ACCOUNT#: [redacted]
23155 I 45 (NORTH FREEWAY) ZIP: 77373
SUBID: 7047 SECT: 01
SPRINGWOODS VILLAGE DELTA
PROPERTY OWNER: GILBANE BUILDING COMPANY HOME:
BUS.: (832) 563-2506

LN#	REQUEST#	CONST	SEQ	AMD	REGS/PERMIT	ISSUED	STR#	VIO#	RECEIPT#
01	301485	311	1		1-0384586-0	02/21/11			0239081-1
02	301485	311	2		1-0384587-3	02/21/11			0239081-1
03	302263	620	1		1-0385611-7	03/15/11			0239928-4
04	302673	311	1		1-0386233-9	03/25/11			0240378-7
05	302673	311	2		1-0386234-2	03/25/11			0240378-7
06	304477	620	1		1-0388641-1	05/11/11			0242273-1
07	305380								

PF1-ADDR INQ PF2-INSP RQST UPD PF3-REQ UPD PF4-VIOL UPD PF5-PERMIT INQ
GP001 - PRESS THE ENTER KEY FOR THE NEXT PAGE, OR
GP003 - ENTER A LN # OVER THE =N IF NEEDED, AND PRESS THE DESIRED PF KEY.

HARRIS COUNTY ENGINEER'S OFFICE - PERMIT DIVISION ENP43
=N PERMITS/REQUESTS FOR A PROPERTY LIST PAGE: 06

PROPERTY#: 339368_ TAX ACCOUNT#: [redacted]
23155 I 45 (NORTH FREEWAY) ZIP: 77373
SUBID: 7047 SECT: 01
SPRINGWOODS VILLAGE DELTA
PROPERTY OWNER: GILBANE BUILDING COMPANY HOME:
BUS.: (832) 563-2506

LN#	REQUEST#	CONST	SEQ	AMD	REGS/PERMIT	ISSUED	STR#	VIO#	RECEIPT#
01	305461	444	1		1-0390027-3	06/08/11			0243481-0
02	305461	444	2		1-0390028-5	06/08/11			0243481-0
03	305727	315	1		1-				
04	306316								

PF1-ADDR INQ PF2-INSP RQST UPD PF3-REQ UPD PF4-VIOL UPD PF5-PERMIT INQ
GP006 - THIS IS THE LAST PAGE. PRESS ENTER FOR PAGE 1, OR
GP003 - ENTER A LN # OVER THE =N IF NEEDED, AND PRESS THE DESIRED PF KEY.